Exhibit J-1

CalEnviroScreen Reports for Meadowbook, California- Disadvantaged Communities Map

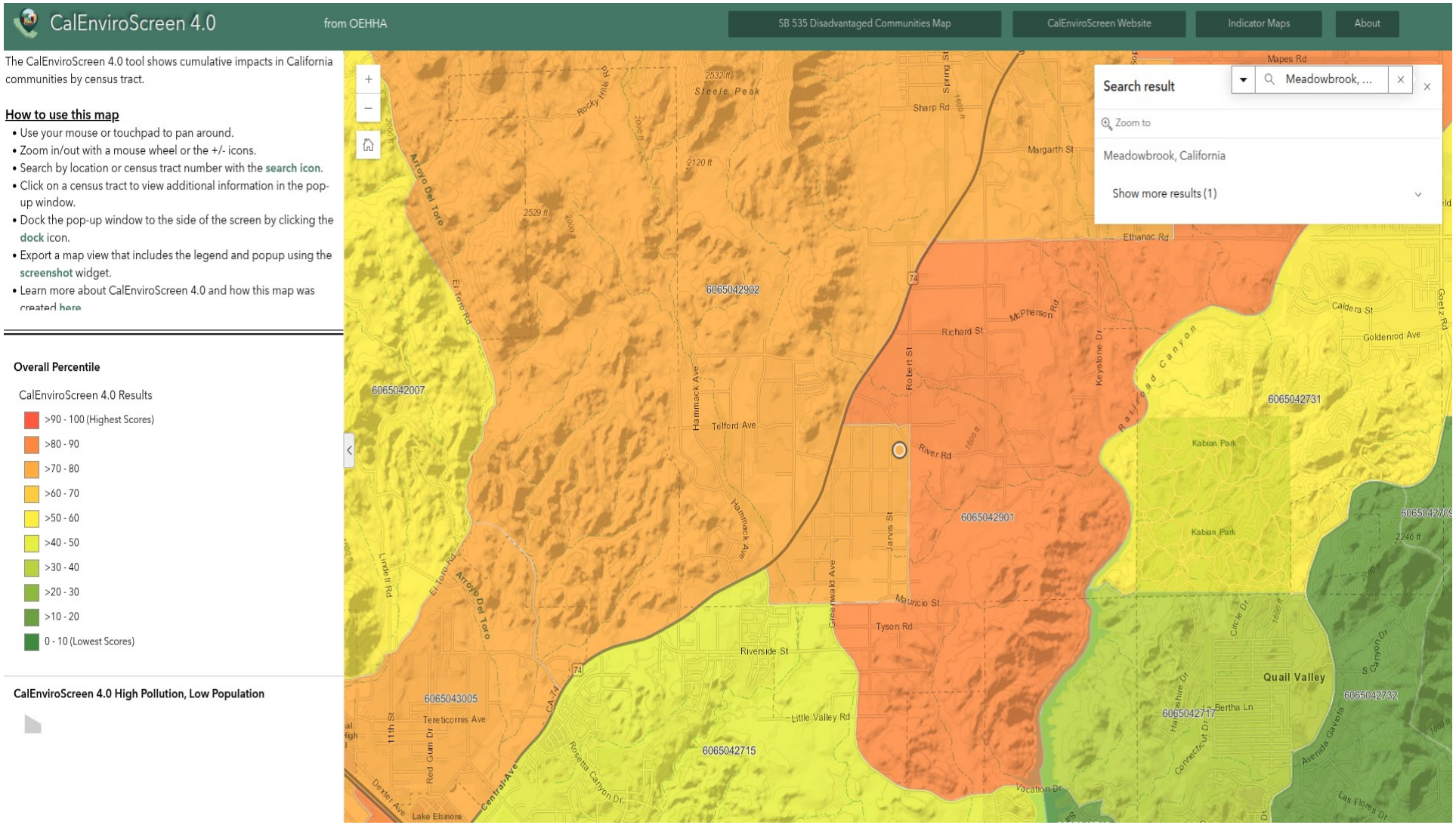

Meadowbrook, California - 70%

Exhibit J-2

CalEnviroScreen Reports for Meadowbook, California- Disadvantage Communities Map Meadowbrook, California

from OEHHA

SB 535 Disadvantaged Communities (2022 Update)

CalEPA SB 535 Page | CalEnviroScreen 4.0 | About

California Climate Investments are funds (Greenhouse Gas Reduction Fund and appropriated by the Legislature) from the proceeds of the State's Cap-and-Trade Program specifically targeted for investment in disadvantaged communities in California. These funds must be used for programs that further reduce emissions of greenhouse gases.

Senate Bill 535 (De León, Statutes of 2012) directed that at least a quarter of the proceeds go to projects that provide a benefit to disadvantaged communities and at least 10 percent of the funds go to projects located within those communities. The legislation gives CalEPA the responsibility for identifying those communities.

How to use this map

- Use your mouse or touchpad to pan around.
- Zoom in/out with a mouse wheel or the +/- icons.
- Search by location or census tract number with the **search icon**.
- Click on a census tract to view additional information in the pop-up window.
- Dock the pop-up window to the side of the screen by clicking the **dock** icon.
- Export a map view that includes the legend and popup using the **screenshot** widget.
- Click the links in the header to view additional resources related to SB 535 Disadvantaged Communities

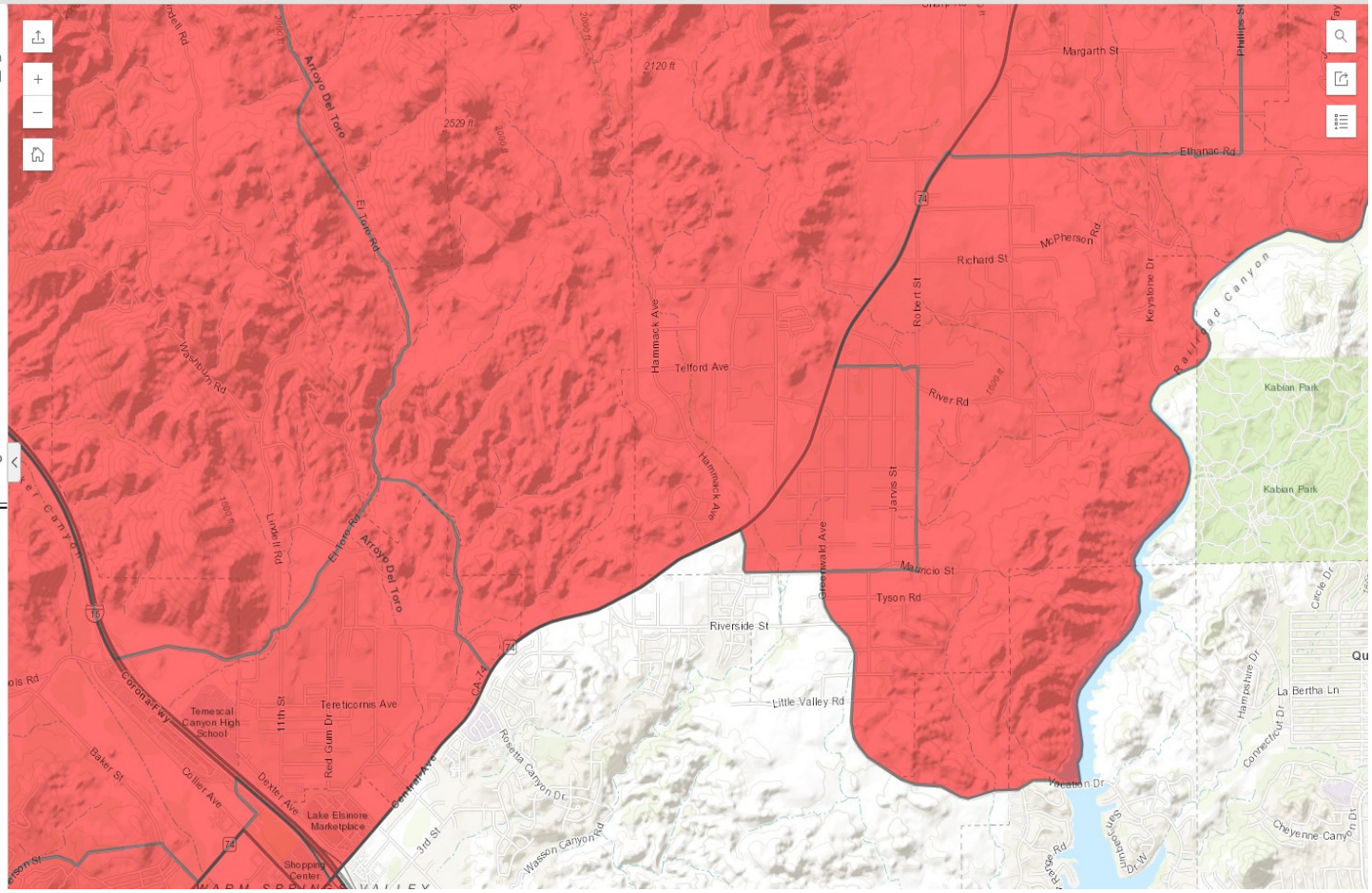

Exhibit J-3
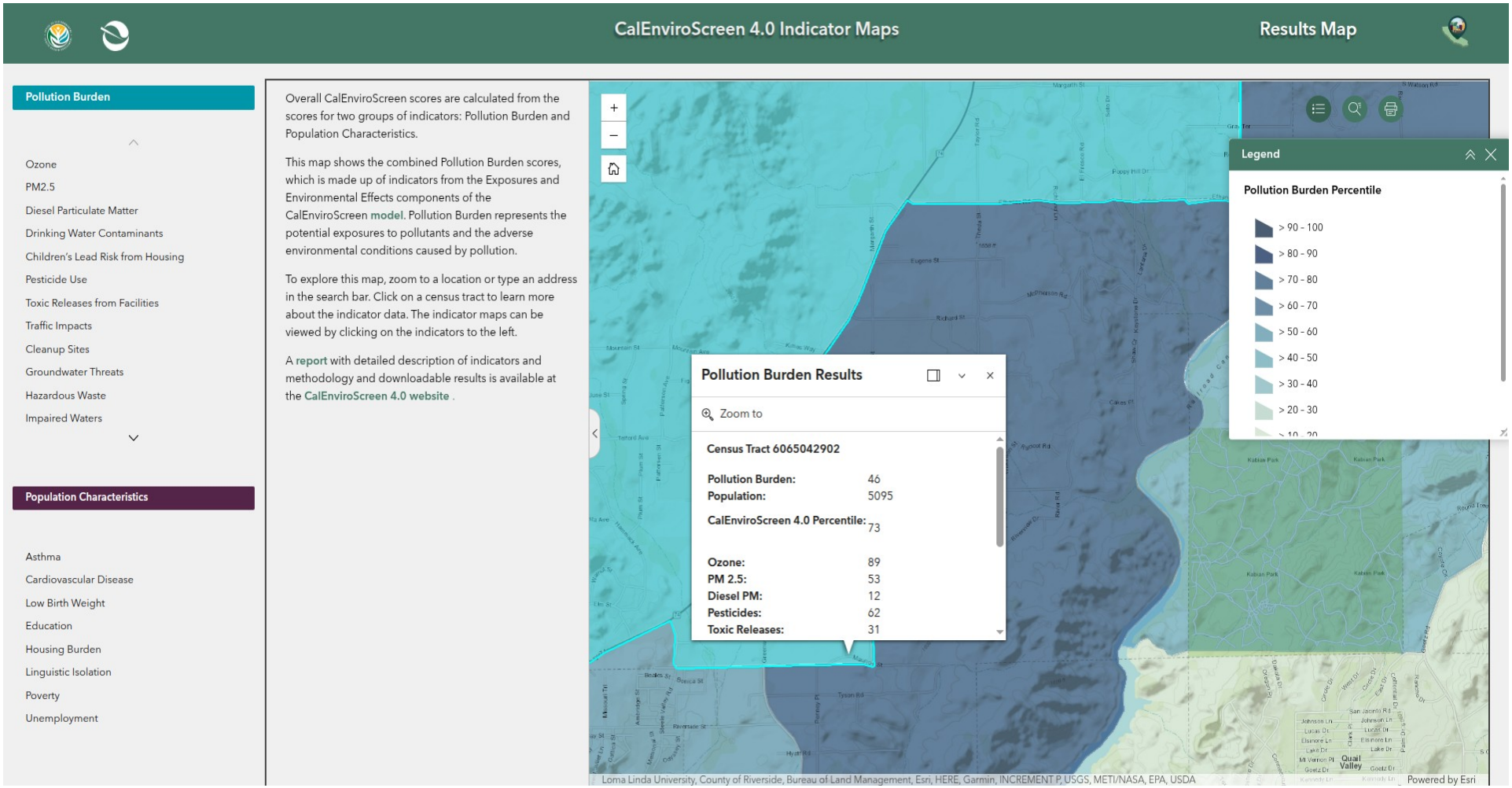
CalEnviroScreen Reports for Meadowbook, California- Pollution Burden Map
Meadowbrook, California: 73%