HUNSAKER
& ASSOCIATES
IRVINE, INC.

PLANNING
ENGINEERING
SURVEYING
GOVERNMENT RELATIONS

IRVINE
LOS ANGELES
PALM DESERT
RIVERSIDE
SAN DIEGO

January 20, 2025

RIVERSIDE COUNTY
Krista Mason
Planning Department
4080 Lemon Street, 12th Floor
Riverside, CA 92502-1409

Subject: **Conditional Use Permit No. 230002**
**Crescent Gardens Cemetery**
**Response to Comments**

Dear Krista:

We have received your comments on the above referenced project, dated October 17, 2024. We have listed the comments in the order received, followed by our response in blue text.

As a result of addressing County staff comments the following site plan changes were updated. Triggered by comments from RCFCD. The caretaker residence and equipment shed were moved from the south to the north side of the "chapel and ceremonial cleansing facility area". This followed RCFCD setback comments. Landscape, Fuel Modification, and Photometric sheets were revised accordingly.

Spillways on basins were removed and replaced with catch basin and drainpipes.

Adjustment made to "A" Street under crossing for storm flows. A wider culver provided.

The parking lot increased in area and parking spaces increased from 145 to 156 for the cemetery caused by moving the caretaker residence and equipment shed. Refer to Cover Sheet of civil and architecture plan package.

Trash enclosures were expanded per request for 3 containers, adjusted based on size and location to not impact parking lot significantly.

Additional call outs, labeling and response to other department requests were incorporated into plans.

Response to County Staff Comments.

**Comments**

1. Provide a project description. Include the business plan, hours of operation, number of employees, etc. Include a detailed narrative of the operations plan including the burial process.

   RESOLVE.

   A project description was provided in 1st submittal. Description is dated 12-8-2022. Additional information was within Initial Study description submitted 6-28-2024 with additional descriptions of operations. However, for your convenience, a Project Description is attached and is the same narrative that will appear in the revised Initial Study.

PRINCIPALS:
FRED GRAYLEE
BRADLEY HAY
KAMAL KARAM
DOUGLAS STALEY
JOSEPH E. WIGHTMAN

FOUNDING PARTNERS:
RICHARD HUNSAKER
TOM R. McGANNON
JOHN A. MICHLER
DOUGLAS G. SNYDER

Three Hughes
Irvine, California
92618-2021
(949) 583-1010 PH
(949) 583-0759 FX
www.hunsaker.com

2. Review the "Filing Instructions for the Use Permit," and include all information required for a Conditional Use Permit (CUP) required on the exhibit. For example, Current/ proposed zoning is missing. Please review the informational portion of the exhibits for completeness.

   CORRECTION MADE. Will review and resubmit.

3. **Repeat Correction** – Correct the Project Description on page A0.01 ("Project Information" page). The square footages of the structures provided on the Site Plan exhibit do not match those provided in the description.

   CORRECTION MADE. Building square feet is clarified on Civil sheets.

## PROJECT SUMMARY

| | |
|---|---|
| PROJECT TITLE: | GARDEN CEMETERY |
| PROJECT DESCRIPTION: | PROPOSED CEMETERY (35 ACRES), MORTUARY (5,300 SF), CHAPEL (10,700 SF), CARETAKER RESIDENCE (1,500 SF), EQUIPMENT SHED (1,300 SF), AND INFRASTRUCTURE CONSISTING OF ROADS, UTILITIES, LANDSCAPED AREAS, PARKING, AND DRAINAGE BASINS TO SUPPORT THE PLANNED USAGE.<br><br>TOTAL PROPOSED PARKING 135 SPACES.<br>* THE PARKING AREA COMPLIES WITH THE APPLICABLE ORDINANCE, GUIDELINES, AND STANDARDS OF RIVERSIDE COUNTY BY PROVIDING SHADING TO 50% OF UNCOVERED AREAS. |
| OCCUPANCY: | A-3, B |
| PROPOSED USE: | CHAPEL, MORTUARY, CARETAKER RESIDENCE |
| CONSTRUCTION: | TYPE V-A (CHAPEL), TYPE V-B (MORTUARY, RESIDENCE), TYPE II-B (EQUIPMENT SHED) |
| PROPOSED BUILDING AREA: | 18,800 SF |
| CHAPEL: | 10,700 SF |
| MORTUARY: | 5,300 SF |
| CARETAKER RESIDENCE: | 1,500 SF |
| EQUIPMENT SHED: | 1,300 SF |
| LOT SIZE: | 35 ACRES |
| ASSESSORS PARCEL NUMBER: | 349170003, 349170004, 349170005, 349170006, 349170007, 349170008, 349170009, 349170010, 349170011, 349170012, 349170013, 349180002, 349180004, 349170005, 349170006, 349170007, 349170008, 349170016, 349170017, 349170020, 349170035, 349190006 |
| ZONING: | |

PROJECT DESCRIPTION: *PROPOSED CEMETERY ON 46.4 ACRES OF 84.99 ACRE PROPERTY, 38.6 ACRES UNDEVELOPED. PROPOSED LEVEL BURIAL GROUNDS ON 24.6 ACRES ON CUP* FOR THE CRESCENT GARDEN CEMETERY CONSISTING OF A 8,983 SQ. FT. CEREMONIAL CLEANSING FACILITY, A 11,079 SQ. FT. CHAPEL (2-STORY) WITH A 2,096 SQ. FT. CARETAKER'S RESIDENCE (2-STORY) AND A 1,358 SQ. FT. EQUIPMENT SHED, AND 156 PARKING SPACES. THE CEMETERY AREA WILL BE DEVELOPED IN PHASES AND BE GATED AND FENCED OR WALLED, AND OCCUPY APPROXIMATELY 24.6 ACRES (GRAVE SITES) WITH AN ANTICIPATED 20,000 GRAVES WITH AN ESTIMATED 10-15 BURIALS PER MONTH. NO CREMATORIUM IS PROPOSED AS A PART OF THIS PROJECT.

4. **Repeat Correction** – Update the total parking space counts on page A0.01 ("Project Information" page) so they are consistent with those listed on the Site Plan. The proposed number of spaces are different amounts.

   Sheet C-6:

REQUIRED PARKING
CHAPEL = 77 PARKING STALLS INCLUDE ADA
ADA = 3 STALLS
ADA VAN = 1 STALL

MORTUARY = 37 PARKING STALLS INCLUDE ADA
ADA = 2 STALLS
ADA VAN = 1 STALL

OTHER
EMPLOYEE = 3 (INCLUDES FULL TIME EMPLOYEE 1, BURIAL PREPARATION STAFF 1, PROPRIETARY PARKING 1)
CARETAKER RESIDENCE = 2

TOTAL REQUIRED = 119 REQUIRED

PARKING PROVIDED (CHAPEL AND MORTUARY SHARE SPACES)
CHAPEL = 61 (INCLUDES 4 ADA)
MORTUARY = 71 (INCLUDES 2 ADA)
TOTAL PROVIDED = 132 (INCLUDES 6 ELECTRIC VEHICLE SPACES )

CEMETERY GRAVE SITE PARKING PROVIDED
HEAD IN PARKING STALLS = 13

TOTAL PARKING PROVIDED = 145

VS. Sheet A0.01:

PARKING SUMMARY: PER RIVERSIDE COUNTY MUNICIPAL CODE (TABLE 22.112.070-A)

| | |
|---|---|
| CHAPEL: | |
| 1 SPACE PER 30SF OF ASSEMBLY SPACE: | 2,286SF / 30 = 77 (PARKING SPACES) |
| MORTUARY: | |
| 1 SPACE PER 30SF OF ASSEMBLY SPACE: | 1,100SF / 30 = 37 (PARKING SPACES) |
| CARETAKER RESIDENCE: | 2 (PARKING SPACES) |
| FULL TIME EMPLOYEE PARKING: | 1 (PARKING SPACES) |
| BURIAL PREPARATION STAFF: | 1 (PARKING SPACES) |
| PROPRIETARY PARKING: | 1 (PARKING SPACES) |
| TOTAL REQUIRED: | |
| PARKING SPACES: | 119 SPACES |
| ACCESSIBLE SPACES: | 6 SPACES |
| ELECTRIC VEHICLE SPACES: | 6 SPACES |
| TOTAL PROVIDED: | 133 SPACES (6 ACCESSIBLE PARKING SPACES, 6 ELECTRIC VEHICLE SPACES) |

*SEE SHEET A0.02 FOR OCCUPANT LOAD & PLUMBING FIXTURE CALCULATIONS.

CORRECTION MADE. Parking calculations revised based on county site plan adjustments related to Flood Control Comments altering site plan per RCFCD meeting 11-19-2024. New parking calculations provided and consistent between Civil and Architect plans. Refer to cover sheet of drawing package.

PARKING SUMMARY: PER RIVERSIDE COUNTY MUNICIPAL CODE (17.188.030)

| | |
|---|---|
| CHAPEL: | |
| 1 SPACE PER 30SF OF ASSEMBLY SPACE: | 2,286SF / 30 = 77 (PARKING SPACES) |
| SHORT TERM BICYCLE PARKING: | 4 SPACES |
| CEREMONIAL CLEANSING FACILITY: | |
| 1 SPACE PER 30SF OF ASSEMBLY SPACE: | 1,100SF / 30 = 37 (PARKING SPACES) |
| SHORT TERM BICYCLE PARKING: | 2 SPACES |
| CARETAKER RESIDENCE: | 2 (PARKING SPACES) |
| FULL TIME EMPLOYEE PARKING: | 1 (PARKING SPACES) |
| BURIAL PREPARATION STAFF: | 1 (PARKING SPACES) |
| PROPRIETARY PARKING: | 1 (PARKING SPACES) |

* TOTAL TENANT NUMBER IS LESS 10 PEOPLE, NO LONG TERM BICYCLE PARKING FACILITY IS REQUIRED.

| | |
|---|---|
| TOTAL REQUIRED: | |
| PARKING SPACES: | 119 SPACES |
| ACCESSIBLE SPACES: | 6 SPACES |
| ELECTRIC VEHICLE SPACES: | 6 SPACES |
| TOTAL PROVIDED: | 143 SPACES<br>(INCLUDES 6 ACCESSIBLE PARKING SPACES, 6 ELECTRIC VEHICLE SPACES) |
| CEMETERY GRAVE SITE PARKING PROVIDED: | 13 SPACES |
| TOTAL PARKING PROVIDED: | 156 |

5. Parking calculation chart, please provide breakdowns that match our Ordinance so we can verify compliance- these calculations shall match and show consistency across all plans:

   a. cemeteries and crematories, mausoleums, columbarium, and funeral establishments when incidental to a cemetery:

      i. 1 space/30 sq. ft of net assembly room area

         1. Provide the separate square footage of the net assembly area for the mortuary and the net assembly area for the chapel, and calculate the number of parking spaces you'd need for each building based on this calculation

      ii. 1 space/employee

      iii. 1 space/vehicle operated on the grounds by the proprietary institution

CORRECTION MADE. Architecture set shows code requirements. Refer to Sheet A0.01.

6. Review the square footage for each building and ensure the numbers on the footprint match the square footage in the building calculation chart or matrix.

CORRECTION MADE. A development footprint is shown on the Civil plans. The architecture plans show total building square footage. Refer to Sheet A0.01. Building square footage and areas are in legend on civil sheet C-6.

7. **Repeat Correction**: Provide a visual example of the F3 lighting proposed on-site so it can be verified that it's meeting lighting standards.

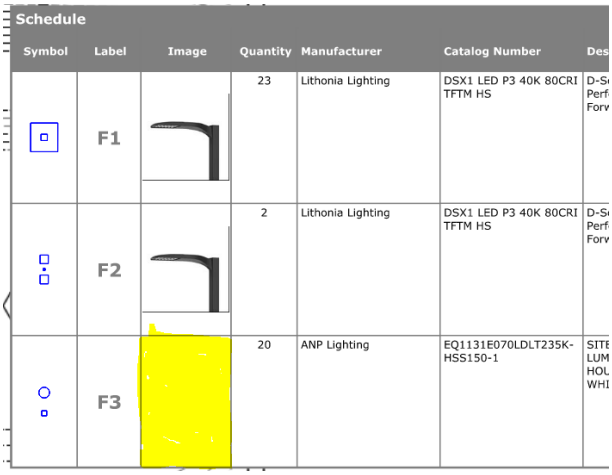

Schedule

| Symbol | Label | Image | Quantity | Manufacturer | Catalog Number | Des |
|---|---|---|---|---|---|---|
| | F1 | | 23 | Lithonia Lighting | DSX1 LED P3 40K 80CRI TFTM HS | D-S Perf Forv |
| | F2 | | 2 | Lithonia Lighting | DSX1 LED P3 40K 80CRI TFTM HS | D-S Perf Forv |
| | F3 | | 20 | ANP Lighting | EQ1131E070LDLT235K-HSS150-1 | SITE LUM HOL WHI |

CORRECTION MADE. Refer to Architecture set. Exhibit provided for the "F3" light note.

**Schedule**

| Symbol | Label | Image | Quantity | Manufacturer | Catalog Number | Description | Number Lamps | Lumens Per Lamp | Light Loss Factor | Wattage | Plot |
|---|---|---|---|---|---|---|---|---|---|---|---|
| | F1 | | 21 | Lithonia Lighting | DSX1 LED P3 40K 80CRI TFTM HS | D-Series Size 1 Area Luminaire P3 Performance Package 4000K CCT 80 CRI Forward Throw Houseside Shield | 1 | 10822 | 0.9 | 102.1727 | 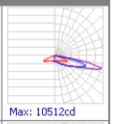 Max: 10512cd |
| | F2 | | 3 | Lithonia Lighting | DSX1 LED P3 40K 80CRI TFTM HS | D-Series Size 1 Area Luminaire P3 Performance Package 4000K CCT 80 CRI Forward Throw Houseside Shield | 1 | 10822 | 0.9 | 204.3454 | 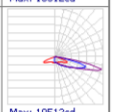 Max: 10512cd |
| | F3 | | 22 | ANP Lighting | EQ1131E070LDLT240K-HSS150-1 | SITELINE - 34" POLE-MOUNTED LUMINAIRE WITH DOME-SHAPED 150° HOUSE SIDE SHEILD, INTERIOR PAINTED WHITE | 1 | 5275 | 0.9 | 70 | 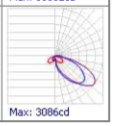 Max: 3086cd |

8. Provide a summary of the result of your conversation with the District 1 Supervisor's Office on your Environmental Justice Community Checklist. Please identify any corrections that were requested, or if you received clearance from the District that the checklist is approved.

CORRECTION MADE. District 1 spreadsheet was provided to Tom Ketchum. Comments have not been returned. Mitigations were presented to Meadowbrook community meeting. Bus shelter was not opposed. This was resent to Krista on 12-19-2024

**Planning Case Progress Report – 11/8/24**

**Project/Case Information**: Current Status: DH

Case Number: CUP230002 Planner: Krista Mason

Description: CUP for the Crescent Garden Cemetery consisting of a 8,983 sq. ft. mortuary, a 6,978 sq. ft. chapel with a 1,366 sq. ft. caretaker's residence and a 1,340 sq. ft. equipment shed, and 145 parking spaces. The cemetery area will be developed in phases and be gated and fenced or walled, and occupy approximately 25 acres with an anticipated 20,000 graves with an estimated 10-15 burials per month. No crematorium is proposed as a part of this project.

CORRECTION MADE An update description for above as noted and based on Riverside County Flood Control District comment changes affecting site plan will be updated.

PROJECT DESCRIPTION: *PROPOSED CEMETERY ON 46.4 ACRES OF 84.99 ACRE PROPERTY, 38.6 ACRES UNDEVELOPED. PROPOSED LEVEL BURIAL GROUNDS ON 24.6 ACRES ON CUP* FOR THE CRESCENT GARDEN CEMETERY CONSISTING OF A 8,983 SQ. FT. CEREMONIAL CLEANSING FACILITY, A 11,079 SQ. FT. CHAPEL (2-STORY) WITH A 2,096 SQ. FT. CARETAKER'S RESIDENCE (2-STORY) AND A 1,358 SQ. FT. EQUIPMENT SHED, AND 156 PARKING SPACES. THE CEMETERY AREA WILL BE DEVELOPED IN PHASES AND BE GATED AND FENCED OR WALLED, AND OCCUPY APPROXIMATELY 24.6 ACRES (GRAVE SITES) WITH AN ANTICIPATED 20,000 GRAVES WITH AN ESTIMATED 10-15 BURIALS PER MONTH. NO CREMATORIUM IS PROPOSED AS A PART OF THIS PROJECT.

Situs Address: 0 UNASSIGNED 349170003

PROJECT APN(s): 349170006, 349170008, 349180016, 349170009, 349180020, 349180006, 349170013,

349170012, 349170010, 349180004, 349180017, 349170011, 349180008, 349180005,

349170007, 349170004, 349180002, 349170005, 349180007, 349180035, 349170003

**LDC Project Review Status:**

| | | |
|---|---|---|
| **Cleared – Recommend Approval** | Environmental Health/Environmental Health | Shantel Bacon 10/17/2024 |

CORRECTION MADE. Cleared for planning commission. Corrections below are out of date.

**Corrections**

**General Correction General**

CORRECTION MADE.

UPDATE 8/22/2024: The review of the Phase I Environmental Site Assessment of proposed Crescent Gardens Cemetery prepared by Environmental Managers and Auditors, Inc. dated January 2021 is complete. UPDATE 8/1/2024: The Phase I Environmental Site Assessment of proposed Crescent Gardens Cemetery prepared by Environmental Managers and Auditors, Inc. dated January 2021 has been reviewed. The following must be addressed prior to review completion: 1. Completed questionnaire(s) for interviews is missing. Provide questionnaire(s), 2. The report indicates there are 43 photos from the site visit, however several photos repeat and in several cases do not reflect the description below the photo. Provide all 43 photos with proper descriptions. ORIGINAL COMMENTS: A Phase I Environmental Site Assessment is required to be submitted to the Department of Environmental Health for review and approval. Contact the Environmental Cleanup Programs at (951)-955-8980 for further information. Please note that further information may be required pending review of all requested items.

Corrective Action: placed in queue for review.

**General Correction General**

CORRECTION MADE.

Provide Development agreement letter from domestic water provider (Lake Elsinore Water District).

Corrective Action: 5/1/24 Waiting for proof of established potable domestic water or water will serve letter from the appropriate purveyor that acknowledges the project. Ensure letter addresses proximity to water and requirements for connection for this project.

**General Correction General**

CORRECTION MADE – Report cleared by Shantel Bacon.

OWTS for commercial projects must have projected waste flows calculated within the OWTS report by a DEH registered Professional of Records. Provide estimated waste flow calculations for domestic waste and non-domestic waste in the operational document and in the general note section of all exhibits that mention the OWTS (septic system) also provide an OWTS report that meets DEH LAMP requirements. visit our website a rivcoeh.org/septic Additional information may be requested upon receipt of information.

Corrective Action: Geo feasibility report was not intended to design for an onsite wastewater treatment system. Submit an OWTS report along with estimated domestic and industrial waste flows from a PR that is currently registered with the department of environmental health (DEH). 8/30/24 received OWTS report. Currently under review. SBacon

**General Correction General**

CORRECTION MADE – refuse area has 3 trash bins refer to site plan.

Provide an updated site plan exhibit that depicts a refuse area that meets the requirements of SB1383. Ensure the appropriate size and number of bins are depicted on the updated exhibit in accordance with SB1383. The updated exhibit should include a legend that indicates Solid Waste Hauler purveyor. For additional information please contact the local solid waste hauler.

Provide a statement indicating how this project will comply with SB1383. For additional information please contact the local solid waste hauler or DEH-LEA at 951.955-8980. Provide a Solid Waste Hauler will serve letter from the appropriate purveyor. Ensure the letter acknowledges the project. Ensure the letter addresses compliance with the requirements of SB1383.

Corrective Action: Refuse enclosure does not depict adequate spacing for three cart refuse collection

**General Correction General**

CORRECTION MADE – letter provided to Shantel Bacon.

In order to propose an Onsite Wastewater Treatment System/OWTS/septic system for this project, the project would have to meet the following requirements: Sanitary sewer service from a purveyor must not be available to the site. Proof of sewer non availability would need to be submitted from the applicable purveyor. This document must recognize this specific project CUP230002/each lot or each parcel by name. Upon receipt of the document additional information/requirements may be requested.

Corrective Action: 5/1/24 DEH has not received proof of sewer non availability.

**General Correction** **General**

CORRECTION MADE. Refer to architecture plans.

Provide Conceptual floor plan for each proposed structure. Floor plan shall include all rooms and plumbing fixtures. Based on floor plans submitted additional information may be requested.

Corrective Action: 5/1/24 Not provided

---

**Cleared – Recommend Approval** LSPC A Package/Transportation 10/17/2024

CORRECTION MADE

Approved per email dated 10/16/24

---

**Cleared – Recommend Approval** Assistant Fire Marshal/Office of the Fire Marshal 10/17/2024

CORRECTION MADE

---

**General Correction** **General**

CORRECTION MADE

Fire Department Access - Fire apparatus access roads shall be provided to within 150 feet of all exterior portions of buildings, unless otherwise approved by the Fire Department. Fire apparatus access roads shall have an unobstructed width of not less than 24 feet. Dead-end fire apparatus access roads in excess of 150 feet shall be provided with an approved turn around. The minimum required turning radius of a fire apparatus access road is 38 feet outside radius and 14 feet inside radius. (For developments within the SRA and within the LRA VHFHSZ, the minimum required turning radius of a fire apparatus access road is 74 feet outside radius and 50 feet inside radius. See California Code of Regulations Title 14 Section 1273.04.) The construction of the fire apparatus access roads shall be all weather and capable of sustaining 75,000 lbs. Unless otherwise approved, the grade of a fire apparatus access road shall not exceed 16 percent and the cross slope shall not exceed 2.5 percent. The angles of approach and departure for fire apparatus access roads shall be a maximum of 6 percent grade change for 25 feet of approach/departure.

Show the dedicated fire access roads with the required turning radii on the plans.

Corrective Action: N/A

---

**General Correction** **General**

CORRECTION MADE

Secondary Access – Unless otherwise approved by the Fire Department, dead end fire apparatus access roads shall not exceed (660 feet for Very High Fire Hazard Severity Zone and High Fire Hazard Severity Zone areas). Secondary egress/access fire apparatus access roads shall provide independent egress/access from/to the area or as otherwise approved by the Fire Department. Secondary egress/access fire apparatus access roads shall be as remote as possible from the primary fire apparatus access road to reduce the possibility that both routes will be obstructed by a single emergency.

Show the primary and secondary access to and from the site

Corrective Action: N/A

**General Correction** **General**

CORRECTION MADE

Sheet A0.03 of the architectural plans should use an occupant load factor of 15 (minimum) for the dining area.

Corrective Action: N/A

**General Correction** **General**

CORRECTION MADE

The Bougainvillea and Salvia plant species are typically on the prohibited plant list. Provide verification that they are fire safe plants. (See the Fuel Modification and Landscape Plans.)

Corrective Action: N/A

**Corrections** Biology/Planning 10/17/2024

**General Correction** **General**

CORRECTION MADE

Corrective Action: MSHCP Consistency Analysis 2/22/2023 This case falls within the Western Riverside County Multiple Species Habitat Conservation Plan (WRMSHCP). This case is required to provide documentation to comply with the WRMSHCP requirements listed below prior to scheduling this case for any public hearing. A habitat suitability assessment(s) and potentially focused survey(s) for the following species are required to complete WRMSHCP review: Riparian/Riverine Area and Vernal Pool Species (WRMSHCP, Section 6.1.2) [X] An assessment onsite pursuant to Section 6.1.2 shall include the identification and mapping of all Riparian/Riverine and Vernal

Pool features and a description of the functions and values of the mapped areas with respect to the species listed under the “Purpose.” Factors to be considered include hydrologic regime, flood storage and flood flow modification, nutrient retention and transformation, sediment trapping and transport, toxicant trapping, public use, wildlife Habitat, and aquatic Habitat. The functions and values assessment will identify areas that should be considered for priority acquisition for the MSHCP Conservation Area, as well as those that affect downstream values related to Conservation of Covered Species. If the mapping required in Section 6.1.2 identifies suitable habitat for any of the six species listed below and the proposed project design does not incorporate avoidance of the identified habitat, focused surveys shall be required. -Least Bell's vireo (Vireo bellii pusillus) -Southwestern willow flycatcher (Empidonax traillii extimus) -Western yellow-billed cuckoo (Coccyzus americanus occidentalis) -Riverside fairy shrimp (Streptocephalus woottoni) -Santa Rosa Plateau fairy Shrimp (Linderiella santarosae) -Vernal Pool fairy shrimp (Branchinecta lynchi) All Riparian/Riverine, Vernal Pools and other species’ suitable habitat identified onsite shall be delineated on the proposed project exhibit submitted through the Planning Department application process. Narrow Endemic Plant Species (WRMSHCP, Section 6.1.3) [X] None Criteria Area Species with Additional Survey Requirements (WRMSHCP, Section 6.3.2) [X] burrowing owl (Athene cunicularia) -- Focused surveys for the plant species listed above may only be undertaken during the blooming period during years with at least normal rainfall (WRMSHCP, Section 6.1.3, page 6-31). Each specific species account should be reviewed in the WRMSHCP Volume 2 Reference Document, Section B, for specific species conservation objectives. [X] Urban Wildlands Interface Guidelines (WRMSHCP, Section 6.1.4) If the proposed project is located in proximity to a WRMSHCP Conservation Area which may result in Edge Effects that would adversely affect biological resources, an Urban/Wildlands Interface analysis will need to be prepared. (See WRMSHCP - Section 6.1.4, pages 6-42 through 6-46). Edge effects associated with existing and future land uses in proximity to the MSHCP Conservation Area shall address: -Drainage -Toxics -Lighting -Noise -Invasive landscape species -Barriers -Grading/Land Development Please refer to the draft Biological Procedures located at http://rctlma.org/Portals/1/EPD/consultant/BiologicalPoliciesProcedures.pdf for report guidelines. To view the WRMSHCP online go to http://rctlma.org/Portals/0/mshcp/index.html.

The EPD requires biological consultants to have a Memorandum of Understanding (MOU) on file with the County prior to any work being performed for an applicant.

A DBESP and MSHCP Consistency Analysis was submitted and approved by Riverside County.

**General Correction General**

CORRECTION MADE

Used for general corrections.

Corrective Action: Correction Jurisdictional Delineation Due to the project site potentially containing one or more drainages, the Environmental Programs Division (EPD) is requiring a Jurisdictional Delineation report, prior to project approval, to determine if the water feature(s) are jurisdictional to the California Department of Fish and Wildlife (CDFW), California Regional Water Quality Board (CRWQCB), and/or the

U.S. Army Corp of Engineers (USACOE). The Jurisdictional Delineation report must be prepared by a qualified biologist who holds a current Memorandum of Understanding with Riverside County and submitted for review by the Environmental Programs Division (EPD). If the water feature(s) found on site is determined to be under the jurisdiction of the CDFW and/or USACOE, then EPD will require permits from the relevant agencies, or proof of consultation with the agencies prior to issuance of any grading permits.

**General Correction General**

CORRECTION MADE

Used for general corrections.

Corrective Action: Determination of Biologically Equivalent or Superior Preservation Due to impacts to a Riparian/Riverine feature proposed by the project, a Determination of Biologically Equivalent or Superior Preservation (DBESP) must be submitted and approved by EPD and the Wildlife Agencies to demonstrate compliance with the requirements of the Western Riverside County Multiple Species Habitat Conservation Plan. Additionally, the DBESP must be submitted to the Wildlife Agencies for a 60 day following approval by the

**General Correction General**

CORRECTION MADE

Used for general corrections.

Corrective Action: EPD is requesting a revised MSHCP consistency analysis and supporting documents as are specified in a comment letter that was sent to the project's consulting biologist on 04/18/24.

Once all comments have been addressed biological reports must be submitted directly to EPD through the Riverside County Plus system using the same PDB numbers of the original documents.

**General Correction General**

DBESP Update

CORRECTION MADE

Corrective Action: The Determination of Biologically Equivalent or Superior Preservation that was submitted to the County and subsequently reviewed by the California Department of Fish and Wildlife and the U.S. Fish and Wildlife Service needs to be revised and re-submitted to the County. The DBESP should commit to the recording of a Conservation Easement and clarify the qualifications of the entity or personnel that will carry out work described in the Habitat Mitigation and Monitoring Plan. Wildlife Agency comments and request were sent to applicant on 9/18/2024.

**General Correction** **General**

CORRECTION MADE

Used for general corrections.

Corrective Action: Prior to project approval project must coordinate with the California Department of Fish and Wildlife for potential impacts to Crotch's Bumble Bee. Applicant must provide documentation from CDFW confirming avoidance/mitigation strategy.

---

**Pending Review** Cultural/Planning 10/17/2024

**General Correction** **General**

Corrective Action: AB52 Tribal Consultation required

Pursuant to Assembly Bill No. 52 (AB 52), this development shall comply with the requirement for (Government to Government) tribal consultation and all other requirements of AB 52.

Tribal consultation, if requested as provided in Public Resources Code Section 21080.3.1, must begin prior to release of a negative declaration, mitigated negative declaration, or environmental impact report for a project. Information provided through tribal consultation may inform the lead agency's assessment as to whether tribal cultural resources are present, and the significance of any potential impacts to such resources.

Dependent on response from tribe review and responsiveness from county staff.

---

**General Correction** **General**

CORRECTION MADE

Phase I Cultural Survey Required

Corrective Action: Phase I Cultural Survey Required Prior to scheduling this project for a public hearing/action, the following cultural resources (archaeological) study shall be submitted and approved by the County Archaeologist: A Phase I Cultural Resources/Archaeological Study is required for the CEQA review of this project. The report shall meet current Riverside County standards for such reports (Investigations Standard Scopes of Work:

http://rctlma.org/planning/content/devproc/culture/arch_survey_standards_phase1_2_3_4.pdf) and be prepared by a County approved professional archaeologist currently listed on the County's Cultural Resources Consultant List posted on the TLMA – Planning website:

http://rctlma.org/planning/content/devproc/consult_lists/culture_consult_list.pdf

The consultant must conduct a systematic intensive pedestrian survey of the entire subject property. The Phase I study must include a records search table/exhibit, documentary evidence of NAHC contact and tribal scoping, a project plan/site exhibit/grading exhibit, and a completed and signed Level of Significance Checklist.

The consultant must send a confidential appendix including all site records within the record search area to the County Archaeologist. The consultant must abide by all the requirements in the MOU with the County. Submittal of older Phase I reports previously prepared for the project site may need to be updated to meet current requirements and to provide current information about any cultural resources identified on the property (including any potentially significant historical structures). The County Archaeologist will determine if older Phase I reports are sufficient or if they need updating.

The report shall be submitted digitally in a document with the ability to track changes and insert comments within the document. Upon review of the draft Phase I study, the County Archaeologist will determine the adequacy of the report and if accepted will clear the condition. Upon acceptance of the report, the consultant shall send one signed or digitally signed copy of the report and confidential appendixes in PDF format. The County Archaeologist will determine if further work or studies are required based on the information contained within the Phase I study

**General Correction General**

Phase II Required

CORRECTION MADE

Corrective Action: Pursuant to PDA 8402 a Phase II Cultural Resources Testing and Evaluation Study is required for site(s)3719-1H, 3719-2H, 3719-12H, and 3719-13H for the CEQA review of this project.

The report shall meet current County standards for such reports and be prepared by an approved professional archaeologist currently listed on the County's Cultural Resources Consultant List posted on the TLMA – Planning website.

A testing plan must first be reviewed and approved by the County Archaeologist prior to fieldwork

**Cleared – Recommend Approval** Grading/Transportation 10/17/2024

General Correction General

CORRECTION MADE

CORRECTIONS: CUP230002 Submittal 1
DATE: 02/21/2023
Contact person: Sam Gonzalez
PH: (951) 295-6959 (cell)
EMAIL: sdgonzal@rivco.org

The Grading Division has reviewed the submitted exhibit for CUP230002. The review was performed on electronic submittal using Bluebeam software. For Grading Division Comments, please see Bluebeam Session ID: 065-888-348. In order to review the comments Bluebeam software is required. A viewer version of Bluebeam is available as a free download here: http://www.bluebeam.com/us/products/free-viewer/

Please request an “Invite” from your “County Planner” Grading Comments:

1) Show the flood plain limits crossing the site and include any proposed storm drain facilities and mitigation measures. Indicate setback(s) from flood plain to proposed slopes and grading.

   Flood plain shown on Civil Sheets C-4, C-5, C-8, C-9

2) Include finish floor elevations for proposed buildings.

   Shown on Civil Sheet C-6

3) If proposing "Private Streets", label streets accordingly.

   Shown on Civil Sheets.

4) Provide Spot Elevations (proposed finish surface elevations) sufficient to demonstrate the streets, driveways, and drainage grades meet minimum requirements. Spot elevations should be provided at street intersections; cul-de-sac ends; beginning and end of driveways and all grade breaks.

   Spot elevations on conceptual grading sheets.

5) Indicate whether the parking lots and access drives/private roads are asphalt or concrete. Keep in mind minimum surface grades are .35% for concrete and 1% for all other surface types.

   Added to legend on Civil Sheets C-6, C-9 to C-11

6) If proposing walls: Identify wall types (garden or retaining). Provide typical sections with maximum retaining wall heights and total wall heights – includes any wall or fencing atop the retaining wall.

   Conceptual fencing on landscape sheets L-1 to L-3

7) Observe slope setbacks per Ordinance 457 and the California Bldg. Code (typical). See comments on TPM38623 for general locations.

   TPM has been withdrawn.

8) How will the off-site drainage from APN: 349-10-019 be accepted on-site?

   V-ditch and down drain picked up refer to Civil Sheet C-8

**General Correction General**

CORRECTION MADE

CORRECTIONS: CUP230002 Submittal 3
DATE: 12/12/2023
Contact person: Sam Gonzalez
PH: (951) 295-6959 (cell)
EMAIL: sdgonzal@rivco.org

The Grading Division has reviewed the submitted exhibit for PPT230002. The review was performed on electronic submittal using Bluebeam software. For Grading Division Comments, please see Bluebeam Session ID: 290-726-759. In order to review the comments Bluebeam software is required. A viewer version of Bluebeam is available as a free download here: http://www.bluebeam.com/us/products/free-viewer/

Please request an "Invite" from your "County Planner" Grading Comments:

1) Sheet 3(C2.2) – Provide copy of Instrument No. 2006-195230, 2005-0681860 and 2005-0578861.

   Will provide.

2) Sheet 3(C2.2) – Place proposed off-site V-Ditch and off-site slope along the south property line within an easement if not included in Permission Letter.

   There is no off-site grading that requires easement.

---

CORRECTIONS: CUP230002 Submittal 4
DATE: 04/16/2024
Contact person: Sam Gonzalez
PH: (951) 295-6959 (cell)
EMAIL: sdgonzal@rivco.org

CORRECTION MADE

The Grading Division has reviewed the submitted exhibit for CUP230002. The review was performed on electronic submittal using Bluebeam software. For Grading Division Comments, please see Bluebeam Session ID: 065-888-348. In order to review the comments Bluebeam software is required. A viewer version of Bluebeam is available as a free download here: http://www.bluebeam.com/us/products/free-viewer/

Please request an "Invite" from your "County Planner" Grading Comments:

1) Sheet C-9 – Indicate width for driveway access.

   Driveway dimension added Sheet C-9

2) Sheet C-9 – Indicate the Q10-Year and Q100-Year storm flows.

   Refer to Sheet C-9 Q's added. Section Added.

   a. Align box culvert with the existing drainage flow.

   b. Section 11-11 is not included on sheet 5.

3) Sheet C-9 – Indicate how down drain will transition at private street.

   Updated and added pipe and drain.

4) Sheet C-9 – “B” Street – Identify and label inlet at cul-de-sac. Provide Standard No.

This is a final engineering design comment. Standard identified as call out in B Street cul de sac.

5) Sheet C-9 – “D” Street – Provide spot elevations and drainage grades for off street parking.

Spot Elevations provided.

6) Sheet C-12 – Include section 11-11 detail.

Detail added.

**Corrections** Flood Control/Flood Control 10/17/2024

See 10/172024 FHR

**General Correction General**

CORRECTION MADE

2.23.2023

CUP 230002 is a proposal for the construction of a cemetery (27 acres of gravesite), a mortuary, chapel, caretaker residence, and a parking lot on an 85.5 acres site near the Elsinore area. Tentative Parcel Map (PM) 38623 is a request to merge 21 parcels encompassing 84.99 acres into 5 lots totaling 9.19 acres, 62.85 acres, 6.82 acres, 3.97 acres, and 2.16 acres, respectively. The site is located at north of Mauricio Street, south of Theda Avenue, east of Robert Street, and west of the San Jacinto River. This case is being processed concurrently with PM 38623.

The topography of the site is generally a southwest-to-northeasterly slope. There are at least seven defined watercourses that traverse the site in various directions which impact all parcels. Two ridges cross the site in a southwest-to-northeasterly and west-to-easterly direction and separate the site into three sub-drainage areas. The northwestern portion of the site is subject to approximately 105 acres of tributary offsite stormwater runoff from the west and drains towards the northeast. The northeastern portion of the site is subject to offsite flow from the hilly area to the east and drains towards the northeast. The southern portion of the site is also subject to offsite flow from the hilly area and drains towards the south. A portion of the project is also impacted by the Special Flood Hazard Area for the 100-year floodplain shown on the Awareness Maps, prepared by the Department of Water Resources, and listed in Ordinance No. 458 Section 5.d. The limits are shown on the Public Flood Hazard Determination Interactive Map found at http://rcflood.org. Awareness floodplains identify the 100-year flood hazard areas using approximate assessment procedures.

Currently, there are no existing or proposed District facilities upstream of the site to alleviate the flood hazard. Additionally, this project will not be associated with any existing or proposed District maintained facilities.

Based on the submitted Site Plan, most of the proposed impervious area is located near the western portion of the site. This includes a chapel, a caretaker residence, a mortuary, a paved road, and parking stalls. The rest of the site is mostly landscaped open space and some natural open space. The existing DWR floodplain limits are proposed as green open space and left as natural, except for the portion of the floodplain that crosses the proposed "A" Street. The project proposes to construct a concrete street dip crossing at the proposed 26-ft wide "A" Street, where the DWR floodplain traverses.

Please note, concrete dip crossings shall not be allowed unless approved by Transportation. County Transportation requires a 100-year flow depth less than 9-in and velocity less than 1.5 fps across streets for the lower frequency storms. Please provide a hydraulic analysis for the street capacity of the proposed "A" Street to ensure that the 100-year discharge of 194 CFS meets the County Transportation requirements.

Additionally, due to the project's proximity to the floodplain, please submit an erosion hazard analysis to determine potential impacts due to lateral migration. No structures will be allowed within the erosion hazard setback area. Should the applicant wish to build within the erosion hazard setback area, adequate scour protection such as riprap revetment shall be provided and shown on future exhibits. If proposing to armor the watercourse or channel banks, they shall be publicly maintained. Any such facility shall meet District standards including required maintenance access roads. For development adjacent to natural channels, an erosion hazard setback is required to protect against erosion due to lateral migration. The criteria applicable to this project is as follows:

- An erosion hazard zone can be defined as an area where erosion may potentially result in damage to a resource. A "resource" may be inclusive of private or public houses, buildings, apartments, fences, utilities, infrastructure, or other feature of appreciable value. The recommended erosion hazard setback shall be as follows: For minor watercourses, with a 100-year flowrate less than 500cfs, the setback shall be a minimum of 25 feet from the limits of the 100-year water surface elevation. The setback shall consider both the watercourse 100-year floodplain extents and an analysis of long-term scour and lateral migration that considers anticipated changes to upstream sediment supply. The particular aspects of these detailed studies shall be discussed with and agreed to by the District prior to performing the studies on a case-by-case basis.

The offsite and onsite drainage are not included in the submittal for a review this time. The project shall protect the site from offsite flows. Future exhibits shall depict flood hazard areas and all other offsite tributary flows on the plan.

Three onsite water quality basins are proposed at the south, west, and northeast corners of the site to capture onsite runoffs. Per the Proposed Hydrology Map exhibit, in the Preliminary Hydrology Report, there are onsite flows that are proposed to be discharged near the south, north, and eastern boundary of the project site prior to mitigation. All onsite flows will need to be collected, treated, and mitigated prior to being discharged. Flows leaving the site will need to be dissipated to help perpetuate the existing natural drainage patterns and conditions with respect to tributary drainage area, outlet points, and outlet conditions. Please include the onsite drainage facilities and how the project proposes to protect itself from offsite flows, in future submittals, for review.

The impervious area proposed within this development will also generate an increase in peak flow rate. At this time, there is a lack of drainage infrastructure downstream of the project site; therefore, this development is required to mitigate for the incremental increase of peak flow rates to offset the impacts to downstream property owners. A proposal for mitigation of the incremental increase of peak flow rate, such as an increased runoff detention basin, shall be shown on the future site plan and calculations supporting the adequacy of the mitigation feature shall be submitted to the District for review and approval prior to the issuance of conditions of approval.

Per the drainage report, the basins were sized using the 2-year & 24-hour duration which do not follow the District's Increased Runoff Criteria. Instead, the drainage report should reflect that the basins are sized for the difference in volume between the pre- and post- development volumes for the 10-year & 24-hour storm duration. Additionally, there is a tributary area of approximately 11.5 acres, along the eastern boundary, that contributes offsite flows to the project site. This area was not accounted for in the pre- or post- hydrology analysis. Please revise the drainage report to reflect the increased runoff sizing criteria for the basins and to include the omitted tributary area.

For clarity purposes please show the proposed basin sizes in acre-feet and include a basin sizing summary table, for each basin, which shows the pre- and post-development peak discharges and total volume (ac-ft). Also, please revise the HEC-RAS analysis cross section's names to correspond with the cross-section stations in the exhibit.

Additionally, the proposed basins and outlet structures must be capable of passing the 100-year storm without damage to the facility, have a 100-year emergency escape, and must have positive drainage and drain completely within a 72-hour maximum drawdown time. "Dead Storage" basins are not acceptable. The emergency escape for the basin(s) and its path through the parcel shall be shown on the exhibit. To prevent flood damage to the proposed structures, all proposed structures along the emergency escape path shall be protected from flooding by either properly elevating the finished floor in relation to the flow path, or by making sure the structures are setback to provide adequate flow through area in the event the emergency escape of the stormwater runoff is necessary.

Basins should be designed per Appendix C – Basin Guidelines of Design Handbook for Low Impact Development Best Management Practices. Final design of the basin, including a complete hydrology study will not be required until the improvement plan stage of this development. The project may need modifications at the plan check stage to comply with the increased runoff criteria. (See comment 015-Flood INCREASED RUNOFF CRITERIA).

Please revise the submitted plans to depict all proposed flood control and drainage facilities including watercourses, floodplain limits, retention basins, channels, storm drains, culverts, grades, and easement or right-of-way widths clearly shown. Centerline curve radii and typical sections shall be shown for all open channel facilities. The exhibit shall depict all points of concentration where offsite runoff enters the site and points of discharge from the site, including the drainage area in acres and the one-percent annual chance (100-year) discharge at each point.

Future exhibit shall depict all proposed grading including but not limited to all cut/fill slopes with slope ratios, pad sites, pad elevations and finished floor elevations. The property's grading should be designed in a manner that perpetuates the existing natural

drainage patterns and conditions with respect to tributary drainage area and outlet points and outlet conditions.

All proposed storm drain improvements collecting and/or conveying the 100-year storm event shall be maintained by County Transportation Department, if smaller than 36-inches, or Flood Control, if larger than 36-inches, (based on the MOU) and shall be designed to the corresponding standards.

After reviewing Tentative Parcel Map 38623/Conditional Use Permit 230002 dated 1/23/2023 and Preliminary Hydrology Report dated November 2022, the District has the following comments that shall be addressed prior to the issuance of conditions approval for this project:

1. Please provide hydraulic calculations for the street capacity of the proposed "A" Street to ensure that the 100-year discharge of 194 CFS meets the County Transportation requirements.

2. Due to the project's proximity to the floodplain, please submit an erosion hazard analysis to determine potential impacts due to lateral migration submit an erosion hazard setback area analysis to determine potential impacts due to lateral migration.

3. Please include the onsite drainage facilities and how the project proposes to protect itself from offsite flows in future submittals for review

4. Please revise the drainage report to reflect the increased runoff sizing criteria for basins and to include the omitted tributary area.

5. For clarity purposes please show the proposed basin size(s) in acre-feet and include a basin sizing summary table, for each basin, which shows the pre- and post- development peak discharges and total volume (ac-ft). Also, please revise the HEC-RAS analysis cross section names to correspond with the cross-section stations in the exhibit.

6. Please revise the submitted plans to depict all proposed flood control and drainage facilities including watercourses, floodplain limits, retention basins, channels, storm drains, culverts, grades, and easement or right-of-way widths clearly shown.

Every effort has been made to identify all potential areas of concern. However, the District may provide further corrections if additional public safety and health issues are discovered during review of subsequent submittals.

Any questions pertaining to this project may be directed to Daniel Aguirre at 951-955-1348 or danaguir@rivco.org.

Corrective Action: N/A

See responses next section. Meetings and discussions with Olivia and Amy.

**General Correction General**

**Flood Hazard Report**

CORRECTION MADE

Corrective Action: FLOOD HAZARD REPORT
CUP 230002
10/17/2024

CUP 230002 is a proposal for the construction of a cemetery (27 acres of gravesite), a mortuary, chapel, caretaker residence, and a parking lot on an 85.5 acres site near the Elsinore area. Tentative Parcel Map (PM) 38623 is a request to merge 21 parcels encompassing 84.99 acres into 5 lots totaling 9.19 acres, 62.85 acres, 6.82 acres, 3.97 acres, and 2.16 acres, respectively. The site is located at north of Mauricio Street, south of Theda Avenue, east of Robert Street, and west of the San Jacinto River. This case is being processed concurrently with PM 38623.

The topography of the site is generally a southwest-to-northeasterly slope. There are at least seven defined watercourses that traverse the site in various directions which impact all parcels. Two ridges cross the site in a southwest-to-northeasterly and west-to-easterly direction and separate the site into separate sub-drainage areas. The northwestern portion of the site is subject to approximately 105 acres of tributary offsite stormwater runoff from the west and drains towards the northeast. The northeastern portion of the site is subject to offsite flow from the hilly area to the east and drains towards the northeast. The southern portion of the site is also subject to offsite flow from the hilly area and drains towards the south. A portion of the project is also impacted by the Special Flood Hazard Area for the 100-year floodplain shown on the Awareness Maps, prepared by the Department of Water Resources, and listed in Ordinance No. 458 Section 5.d. The limits are shown on the Public Flood Hazard Determination Interactive Map found at http://rcflood.org. Awareness floodplains identify the 100-year flood hazard areas using approximate assessment procedures.

Currently, there are no existing or proposed District facilities upstream of the site to alleviate the flood hazard.

Based on the submitted Site Plan, most of the proposed impervious area is located near the western portion of the site. This includes a chapel, a caretaker residence, a mortuary, a paved road, and parking stalls. The rest of the site is mostly landscaped open space and some natural open space. The existing DWR floodplain limits are proposed as green open space and left as natural, except for the portion of the floodplain that crosses the proposed “A” Street. The project proposes to construct a 2x8’ RCB culvert at the proposed 26-ft wide “A” Street where the DWR floodplain traverses.

The applicant has submitted a HEC-RAS floodplain analysis to establish the limits of the DWR floodplain and provide hydraulic analysis for the proposed “A” Street crossing. The submitted HEC-RAS analysis is establishing the floodplain limit by straight line interpolation between cross section instead of detailed contour interpolation. Revise the floodplain limits to show an accurate depiction of the water surface limits. The HEC-RAS model information submitted did not clearly explain the boundary conditions used or reason for ineffective flow area determination. The upstream and downstream control and boundary conditions should be a minimum of 200 feet upstream and downstream

of the property lines. Cross sections should not bend within the floodplain limits. Cross sections should be perpendicular to the floodplain flow direction. (Correction #1)

Response: The cross sections in the HEC-RAS model have been revised per comment on 12-11-2024.

The floodplain impacting the project site shall be kept free of all structures and obstruction including fill material and flow obstructing fences (e.g. chain-link block wall, etc.); any modification to the floodplain may require the applicant to submit a floodplain analysis to determine potential impacts of the development to the floodplain. Any activities or construction are prohibited within the floodway unless it has been demonstrated through hydrologic and hydraulic analyses that the proposed encroachments would not result in any increase in flood The Site Plan shows a 25-foot setback from the floodplain limits to account for erosion. This satisfies the District's erosion hazard setback requirement which states that for minor watercourses (Q100 less than 500cfs) the setback shall be a minimum of 25 feet from the limits of the 100-year water surface elevation; however, adjustments need to be made to the determined floodplain limits as previously stated above. No structures will be allowed within the erosion hazard setback area. Should the applicant wish to build within the erosion hazard setback area, adequate scour protection such as riprap revetment shall be provided and shown on future exhibits to protect from erosive velocities (above 6 fps). If proposing to armor the watercourse or channel banks, they shall be publicly maintained. Any such facility shall meet District standards including required maintenance access roads. Given the nature of the floodplain in this area, if there were not a dwelling structure (caretaker residence) proposed along the top of the armored embankment slope within the erosion hazard zone, the District would permit a privately maintained slope in this location. (Correction #2)

Response: The caretaker residence has been moved. Please see updated site plan. There is no significant change with this adjustment per 12-11-2024

To improve hydraulic performance and prevent flows flanking to the south, the erosion embankment should be reconfigured with a smooth alignment and avoid sharp curves. This will prevent flows hitting the embankment perpendicularly and compromising the integrity of the embankment. (Correction #3)

Response: The model has been revised per previous communications, per 12-11-2024. Flow no longer hit embankment as described.

The submitted hydraulic analysis proposes a 2'x8' RCB within "A" Street that can fully pass the 10-year storm, but results in some overflow in the 100-year storm – the depth and velocity noted for this overflow were 8-in and 2.1 fps. County Transportation requires a 100-year flow depth less than 9-in and velocity less than 1.5 fps across streets for the lower frequency storms. Provide a culvert with 100-year storm flow capacity of the proposed "A" Street to ensure that the discharge of 200 CFS meets the County Transportation requirements. (Correction #4)

Response: The model and culvert have been revised per previous communications, 12-11-2024. We are now proposing a 2'x14' culvert. 100-year flow no longer overflows over the roadway.

Per the hydrology report, flows will be collected in a series of surface and underground drainage facilities. A grading plan including the drainage facilities' alignment has been provided, but estimated storm drain sizes and design flow rates have not been indicated in the grading plans or through a supplement in the drainage report. The project shall protect the site from offsite flows and collect and convey 100 year flows. Future submittals shall include a drainage facilities exhibit labeled with sizes and flowrates. (Correction #5)

Response: Flow rates and pipe sizes are shown on separate Conceptual Grading Plans. Refer to civil sheets C-9 to C-11.

Storm drains should be constructed within street rights of way whenever possible. Maintenance access must be provided to storm drain inlets and outlets. The proposed erosion protection embankment slope shows a future easement for the District, but the grading plans do not indicate a 15-foot access road. The maintenance responsibility for drainage facilities shall be determined when land division and use cases are submitted to the County for processing and review. (Correction #2) All proposed storm drain improvements collecting and/or conveying the 100-year storm event shall be maintained by County Transportation Department, if smaller than or equal to 36-inches and within public road right of way, or Flood Control, if larger than 36-inches, (based on the MOU) and shall be designed to the corresponding standards. The intended maintenance entity of the proposed culvert within "A" street and series of storm drains of unknown size is not yet indicated. (Correction #6)

Response: All Storm drain facilities on this project are privately maintained. The project contains no storm drain facilities 36 inches or greater.

This project proposes three detention basins and a water quality basin. The detention basins outlet the flows to existing natural streams. There is minimal riprap shown on the site plan to mitigate erosion. These flows shall be released in a manner that prevents erosion and hydromodification downstream. Velocities shall be less than 6 fps and the flows shall not be released in a concentrated manner. Future submittals shall include analysis, indicating approximate outlet geometry and hydraulics, and pertinent information that indicates the flows being released from the detention basins are released in a manner that perpetuates natural drainage patterns. (Correction #7)

Response: Per previous correspondence, all storm drain outlets are shown with energy dissipation. Hydraulic calculations for energy dissipators will be provided in future construction plan submittals. All outlets to natural streams will have design velocities less than 6 fps.

The impervious area proposed within this development will also generate an increase in peak flow rate. At this time, there is a lack of drainage infrastructure downstream of the project site; therefore, this development is required to mitigate for the incremental increase of peak flow rates to offset the impacts to downstream property owners. A proposal for mitigation of the incremental increase of peak flow rate, such as an increased runoff detention basin, is shown on the future site plan and calculations supporting the adequacy of the mitigation feature have been submitted to the District for review and approval prior to the issuance of conditions of approval.

Additionally, the proposed basins and outlet structures must be capable of passing the 100-year storm without damage to the facility, have a 100-year emergency escape, and must have positive drainage and drain completely within a 72-hour maximum drawdown

time. "Dead Storage" basins are not acceptable. The emergency escape for the basin(s) and its path through the parcel shall be shown on the exhibit. To prevent flood damage to the proposed structures, all proposed structures along the emergency escape path shall be protected from flooding by either properly elevating the finished floor in relation to the flow path, or by making sure the structures are setback to provide adequate flow through area in the event the emergency escape of the stormwater runoff is necessary.

Basins should be designed per Appendix C – Basin Guidelines of Design Handbook for Low Impact Development Best Management Practices. Final design of the basin, including a complete hydrology study will not be required until the improvement plan stage of this development. The project may need modifications at the plan check stage to comply with the increased runoff criteria. (See comment 015-Flood INCREASED RUNOFF CRITERIA).

Please revise the submitted plans to depict all proposed flood control and drainage facilities including watercourses, floodplain limits, retention basins, channels, storm drains, culverts, grades, and easement or right-of-way widths clearly shown. The exhibit shall depict all points of concentration where offsite runoff enters the site and points of discharge from the site, including the drainage area in acres and the one-percent annual chance (100-year) discharge at each point. (Correction #8)

Response: Flow rates (Que's) and points of concentration are shown on separate Conceptual Grading Plans. Refer to civil sheets C-9 to C-11.

Exhibits shall depict all proposed grading including but not limited to all cut/fill slopes with slope ratios, pad sites, pad elevations and finished floor elevations. The property's grading should be designed in a manner that perpetuates the existing natural drainage patterns and conditions with respect to tributary drainage area and outlet points and outlet conditions.

Based on the review of materials submitted for DAC review on October 17, 2024, the District has the following corrections which shall be addressed prior to issuance of conditions of approval:

1. The submitted HEC-RAS analysis is establishing the floodplain limit by straight line interpolation between cross section instead of detailed contour interpolation. Revise the floodplain limits to show an accurate depiction of the water surface limits. Include HEC-RAS model information explaining the boundary conditions used or reason for ineffective flow area determination. The upstream and downstream control and boundary conditions should be a minimum of 200 feet upstream and downstream of the property lines. Cross sections should not bend within the floodplain limits. Cross sections should be perpendicular to the floodplain flow direction. Submit revised model to opearson@rivco.org upon next submittal.

   Response: Per previous correspondence, 12-11-2024, the HEC-RAS model has been revised per comment.

2. The proposed embankment slope within the erosion hazard setback area shows riprap revetment but does not show a maintenance access road. Any such facility shall meet District standards including required maintenance access roads.

Response: See revised conceptual grading plan. Refer to civil sheet C-9 to C-11.

a. Alternatively, consider relocating the caretaker's residence - its current location is adjacent to an embankment within the erosion hazard zone, and the current site plan does not provide enough room for this embankment slope to be a District maintained facility. This slope can be privately maintained if a structure intended as a dwelling unit is not adjacent to it/atop the slope. A standard 15-foot access road and District maintenance of the slope is not required if the caretaker's residence is relocated to another suitable location on the site plan.

   Response: The Caretaker's residence is moved. See revised conceptual grading plan. Refer to civil sheet C-9 to C-11.

3. To improve hydraulic performance and prevent flows flanking to the south, the erosion embankment should be reconfigured with a smooth alignment and avoid sharp curves.

   Response: New model no longer shows flood area hitting the embankment as described.

4. County Transportation requires a 100-year flow depth less than 9-in and velocity less than 1.5 fps across streets for the lower frequency storms. Please provide hydraulic calculations for the street capacity and/or culvert facility of the proposed "A" Street to ensure that the 100-year discharge of 200 CFS meets the County Transportation requirements.

   Response: Proposed Culvert and New model no longer shows 100-year flow overtopping the roadway. Refer to civil sheet C-9 section 11-11 for culvert.

5. Future submittals shall include a drainage facility exhibit labeled with sizes and flowrates.

   Response: Flow rates and pipes sizes are shown on the conceptual grading plan. Refer to civil sheets C-9 to C-11.

6. Indicate the intended maintenance entity of the proposed culvert within "A" street and the series of storm drains of unknown size within street alignments, including easements if applicable.

   Response: All drainage facilities are privately maintained.

7. Future submittals shall include analysis and information to show that the flows being released from the detention basins are released in a manner that perpetuates natural drainage patterns. These flows shall be released in a manner that prevents erosion and hydromodification downstream. Velocities shall be less than 6 fps and the flows shall not be released in a concentrated manner.

   Response: Per previous correspondence, 12-11-2024, all storm drain outlets are shown with energy dissipation. Hydraulic calculations for energy dissipators will be provided in future construction plan submittals. Design velocities will be no greater than 6 fps.

8. Please revise the submitted plans to depict all proposed flood control and drainage facilities including watercourses, floodplain limits, retention basins, channels, storm drains, culverts, grades, and easement or right-of-way widths clearly shown. The exhibit shall depict all points of concentration where offsite runoff enters the site and points of discharge from the site, including the drainage area in acres and the one-percent annual chance (100-year) discharge at each point.

   Response: Information as requested is shown on conceptual grading plan. Refer to civil sheets C-9 to C-11.

Every effort has been made to identify all potential areas of concern. However, the District may provide further corrections if additional public safety and health issues are discovered during review of subsequent submittals.

Any questions pertaining to this project may be directed to Olivia Pearson at 951-955-1283 or opearson@rivco.org.

| | | |
|---|---|---|
| **Cleared - Recommend Approval** | Park and Open Space/park and Open Space | 10/17/2024 |
| **Assignment Pending** | Project Manager/Planning | |

**CONDITIONS OF APPROVAL**

060 - BS-Grade CURBS ALONG PLANTERS

Prior to issuance of a grading permit, the grading plan shall include a six-inch-wide curb with a twelve (12) inch wide walkway and shall be constructed along planters on end stalls adjacent to automobile parking areas. Public parking areas shall be designed with permanent curb, bumper, or wheel stop or similar device so that a parked vehicle does not overhang required sidewalks, planters, or landscaped areas.

060 - BS-Grade EASEMENTS/PERMISSION

Prior to the issuance of a grading permit, it shall be the sole responsibility of the owner/applicant to obtain any and all proposed or required easements and/or permissions necessary to perform the grading herein proposed.

A notarized letter of permission and/or recorded easement from the affected property owners or easement holders shall be provided in instances where off site grading is proposed as part of the grading plan.

In instances where the grading plan proposes drainage facilities on adjacent off site property, the owner/ applicant shall provide a copy of the recorded drainage easement or copy of Final Map.

060 - BS-Grade IF WQMP IS REQUIRED

If a Water Quality Management Plan (WQMP) is required, the owner / applicant shall submit to the Building & Safety Department, the Final Water Quality Management Plan (WQMP) site plan for comparison to the grading plan.

060 - BS-Grade IMPROVEMENT SECURITIES

Prior to issuance of a Grading Permit, the applicant may be required to post a Grading and/or Erosion Control Security. Please contact the Riverside County Transportation Department for additional information and requirements.

060 - Fire Hazardous Vegetation and Fuel Management Plan

Projects in the Local Responsibility Area Very High Fire Hazard Severity Zone and the State Responsibility Area Very High, High and Moderate Fire Hazard Severity Zones shall provide a Final Hazardous Vegetation and Fuel Management Plan to be reviewed and approved by the Fire Department. Contact our office for submittal instructions.

060 - Fire Water Plans

The applicant or developer shall furnish one copy of the water system plans to the Fire Department for review. Plans shall be signed by a registered civil engineer, containing a Fire Department approval signature block, and shall conform to hydrant type, location, spacing and minimum fire flow. Once plans are signed by the local water company, the originals shall be presented to the Fire Department for signature.

060 - Planning-PAL Gen - Custom

County Paleontological Report (PDP) No. 230013, submitted for this case (CUP230002), was prepared by CRM Tech and is entitled: "Paleontological Resource Assessment Report, Crescent Gardens Cemetery Project, Assessor's Parcel Numbers 349-170-003 to -007; -009 to -013; 349-180-002, -004 to -008, -016, -020 and -035, Meadowbrook Area of Riverside County, California, CUP230002", dated August 28, 2023. PDP230013 recommended a paleontological resource impact mitigation program be developed and implemented prior to beginning of the project to prevent impacts or reduce them to a level less than significant only within the old alluvial channel deposits in the mid-south-southeastern portion of the project area. (Paleontological monitoring is not recommended/required in other parts of the project area.) HENCE:

PRIOR TO ISSUANCE OF GRADING PERMITS:

1. The applicant shall retain a qualified paleontologist approved by the County to create and implement a project-specific plan for monitoring site grading/earthmoving activities (project paleontologist).

2. The project paleontologist retained shall review the approved development plan and grading plan and conduct any pre-construction work necessary to render appropriate monitoring and mitigation requirements as appropriate. These requirements shall be documented by the project paleontologist in a Paleontological Resource Impact Mitigation Program (PRIMP). This PRIMP shall be submitted for approval by the County Geologist prior to issuance of a Grading Permit. Information to be contained in the PRIMP, at a minimum and in addition to other industry standards and Society of Vertebrate Paleontology standards, are as follows:

    a. A corresponding and active County Grading Permit (BGR) Number must be included in the title of the report. PRIMP reports submitted without a BGR number in the title will not be reviewed.

b. PRIMP must be accompanied by the final grading plan for the subject project.

c. Description of the proposed site and planned grading operations.

d. Description of the level of monitoring required for all earth-moving activities in the project area.

e. Identification and qualifications of the qualified paleontological monitor to be employed for grading operations monitoring.

f. Identification of personnel with authority and responsibility to temporarily halt or divert grading equipment to allow for recovery of large specimens.

g. Direction for any fossil discoveries to be immediately reported to the property owner who in turn will immediately notify the County Geologist of the discovery.

h. Means and methods to be employed by the paleontological monitor to quickly salvage fossils as they are unearthed to avoid construction delays.

i. Sampling of sediments that are likely to contain the remains of small fossil invertebrates and vertebrates.

j. Procedures and protocol for collecting and processing of samples and specimens.

k. Fossil identification and curation procedures to be employed.

l. Identification of the permanent repository to receive any recovered fossil material. *Pursuant the County “SABER Policy”, paleontological fossils found in the County should, by preference, be directed to the Western Science Center in the City of Hemet. A written agreement between the property owner/developer and the repository must be in place prior to site grading.

m. All pertinent exhibits, maps, and references.

n. Procedures for reporting of findings.

o. Identification and acknowledgement of the developer for the content of the PRIMP as well as acceptance of financial responsibility for monitoring, reporting and curation fees. The property owner and/or applicant on whose land the paleontological fossils are discovered shall provide appropriate funding for monitoring, reporting, delivery and curating the fossils at the institution where the fossils will be placed and will provide confirmation to the County that such funding has been paid to the institution.

p. All reports shall be signed by the qualified paleontologist responsible for the report’s content. All reports shall also be signed by all other parties responsible for the report’s content (eg. Professional Geologist),

as necessary. A signed electronic copy of the report, project plans, and all required review applications shall be uploaded to the County's PLUS Online System:

(https://planning.rctlma.org/sites/g/files/aldnop416/files/2023-06/PLUS%20Online%20Upload%20Instructions%20-%20Paleontology%20-%20Updated%20June%202023.pdf).

Reports and/or review applications are not to be submitted directly to the County Geologist, Project Planner, Land Use Counter, Plan Check, or any other County office. In addition, the applicant shall submit proof of hiring (i.e., copy of executed contract, retainer agreement, etc.) a project paleontologist for the in-grading implementation of the PRIMP.

Safeguard Artifacts Being Excavated in Riverside County (SABER)

060 - Transportation RCTD-MAP-WQ - Santa Ana Region - FINAL WQMP REQUIRED

The project is located in the Santa Ana watershed. An approved Water Quality Management Plan (WQMP) is required prior to ~~recordation of a final map~~ or issuance of a grading permit. The project shall submit a single PDF on two CD/DVD copies, in accordance with the latest version of the WQMP manual, found at https://rctlma.org/trans/Land-Development/WQMP. In addition, the project proponent shall ensure that the effects of increased peak flowrate for the 1, 3, 6, 24-hour storm events for the 2, 5, and 10-year return periods from the project are mitigated. Projects within an airport influence area may require less than 48-hour drawdown times. All details necessary to build BMPs per the WQMP shall be included on the grading plans.

CORRECTION MADE 12-6-2024 – edit concurred with Kevin T.

060 - Transportation RCTD-USE - Annexation into a Maintenance District

In the event that the project requires a grading permit, the project proponent shall comply with County requirements within public road rights-of-way, in accordance with Ordinance No. 461.11. The project proponent shall provide assurance of maintenance of various facilities within the public road right-of-way by filing an application and completing the annexation process with the applicable maintenance entity/district(s) for annexation into the Landscaping and Lighting Maintenance District No.

89-1-Consolidated by contacting the Transportation Department at (951) 955-6767, and/or any other maintenance district approved by the Transportation Department or by processing and filing a Landscape Maintenance Agreement as directed by the Transportation Department Plan Check Division. Said annexation may include the following:

(1) Landscaping.

(2) Streetlights.

(3) Graffiti abatement of walls and other permanent structure(s).

(4) Street sweeping.

(5) WQMP BMP(s) or catch basin inserts.

For street lighting, the project proponent shall contact the Transportation Department L&LMD 89-1-C Administrator and submit the following:

(1) Completed Transportation Department application.

(2) Appropriate fees for annexation.

(3) Two (2) sets of street lighting plans approved by Transportation Department.

(4) Streetlight Authorization form from SCE, IID or other electric provider.

or as approved by the Director of Transportation.

060 - Transportation RCTD-USE - Approved Maintenance Exhibit (ME)

In the event that the project requires a grading permit, the Project shall submit a Maintenance Exhibit (ME) for approval, on two (2) 11 in x17 in hard copies and two (2) CD copies to County or Valley-Wide Recreation and Park District. The ME shall show, with applicable quantities (i.e. square footage, or lengths), potable and recycled water meters, irrigated landscaped areas, non-irrigated landscaping, open space, trails and pedestrian pathways, WQMP related BMPs, basin bottoms, fence and walls, graffiti, weed abatement, traffic signals, and any other feature that may require permanent maintenance (e.g. storm drains, low flow drains, community buildings, restrooms, parking lots, block walls, and fencing) with the entities proposed to provide maintenance. All right-of-way areas shall be separately delineated. The ME shall have the engineer's certification for square footage calculations and note the proposed maintenance entity responsible for all maintenance activities, including those that cannot be depicted on the exhibit (e.g. street sweeping, etc.).

The Transportation Department will clear this condition after the ME is approved by the County, Valley-Wide Recreation and Park District, and/or other associated public/quasi-public maintenance entities. The approved ME shall be provided to the Transportation Department, three (3) 11 in x 17 in hardcopies and one fully signed PDF copy on CD.

Note: Landscaping in the road right-of-way shall be maintained by a public or quasi-public entity, as approved by the Transportation Department, Landscape Division. To ensure water quality compliance, the County discourages the use of HOAs for maintaining WQMP related BMPs. County Policy B-12 limits the total tax burden. Tax burden includes Community Facility Districts (CFDs), Assessment District, ad valorem taxes, any other assessments, taxes, and fees. The local water purveyor may require the use of reclaimed water for landscaping, prior to approving water improvement plans. ME shall be approved prior to submitting CC&R's, and submitting water improvement plans.

060 - Transportation RCTD-USE - Coordination with Others

Approval of the Street Improvement plans by the Transportation Department will clear this condition. The Project shall comply with recommendations from the following:

~~Coordinate with TPM38731.~~

CORRECTION MADE 12-6-2024 – edit concurred with Kevin T.

060 - Transportation RCTD-USE - Submit Grading Plans

The project proponent shall submit two sets of grading plans (24 in x 36 in) to the Transportation Department for review and approval. If road right-of-way improvements are required, the project proponent shall submit street improvement plans for review and approval, open an IP account, and pay for all associated fees in order to clear this condition. The standard plan check turnaround time is 10 working days. Approval is required prior to issuance of a grading permit.

NOTE:

1. The grading plan submittal shall include ADA accessibility facility details if a separate plan is not required by the Building & Safety Department. The plan details of the accessibility facilities are for inspection purposes.

2. Proposed gates shall be identified on the grading plans. Gates are to be located 35 FT from the flowline of the adjacent street or as approved by the Director of Transportation.

CORRECTION MADE 12-6-2024 – edit concurred with Kevin T. 30'

070 - Planning-PAL Gen - Custom

PRIOR TO GRADING FINAL:

The applicant shall submit a Paleontological Monitoring Report prepared for site grading operations at this site. The report shall be certified by the professionally qualified Paleontologist responsible for the content of the report. This Paleontologist must be on the County's Paleontology Consultant List. The report shall include the findings made during all site grading activities and an appended itemized list of fossil specimens recovered during grading (if any) and proof of accession of fossil materials into the pre-approved museum repository. In addition, all appropriate fossil location information shall be submitted to the Western Center, the San Bernardino County Museum and Los Angeles County Museum of Natural History, at a minimum, for incorporation into their Regional Locality Inventories.

A signed electronic copy of the report shall be uploaded to the County's PLUS Online System:

(https://planning.rctlma.org/sites/g/files/aldnop416/files/2023-06/PLUS%20Online%20Upload%20Instructions%20-%20Paleontology%20-%20Updated%20June%202023.pdf).

Reports and/or review applications are not to be submitted directly to the County Geologist, Project Planner, Land Use Counter, Plan Check, or any other County office.

070 - Transportation 70 - TRANSPORTATION - Grading – Design Intent: Cemetery Cut and Fill Slope Landscape Only

Grading - Design Intent: Cemetery Cut and Fill Slope Landscape Only

Where applicable, landscape areas requiring slope stabilization shall be assessed during construction by the following parties: geotechnical engineer, civil engineer, county landscape inspector and/or county grading inspector. When evidence exists that

the slope landscape design is inadequate, the parties listed shall decide whether modifications are necessary as a result of changed conditions. In making such a decision, the following shall be adhered to (Building & Safety Erosion Control Standards):

- 4:1 Slopes
  - 5-15 gallon trees & 1- 5 gallon shrubs
- 2:1 Slopes
  - 15-24 gallon trees & 1-5 gallon shrubs

The permit / applicant shall be required to attain approval and record any changes that may occur between preliminary design and the start of construction.

080 - BS-Grade NO BUILDING PERMIT W/O GRADING PERMIT

Prior to the issuance of any building permit, the property owner shall obtain a grading permit and/or approval to construct from the Building and Safety Department.

080 - BS-Grade ROUGH GRADE APPROVAL

Prior to the issuance of any building permit, the applicant shall obtain rough grade approval and/or approval to construct from the Building and Safety Department. The Building and Safety Department must approve the completed grading of your project before a building permit can be issued. Rough Grade approval can be accomplished by complying with the following:

1. Submitting a “Wet Signed” copy of the Soils Grading Report containing substantiating data from the Soils Engineer (registered geologist or certified geologist, civil engineer or geotechnical engineer as appropriate) for his/her certification of the project.

2. Submitting a “Wet Signed” copy of the Rough Grade certification from a Registered Civil Engineer certifying that the grading was completed in conformance with the approved grading plan.

3. Requesting a Rough Grade Inspection and obtaining rough grade approval from a Riverside County inspector.

4. Rough Grade Only Permits: In addition to obtaining all required inspections and approval of all final reports, all sites permitted for rough grade only shall provide 100 percent vegetative coverage or other means of site stabilization as approved by County Inspector prior to receiving a rough grade permit final. Prior to release for building permit, the applicant shall have met all rough grade requirements to obtain Building and Safety Department clearance.

080 - Fire Fire Department Plan Review

Submittal of construction plans to the Fire Department will be required. This will require a separate permit application submitted directly to the Fire Department. This shall include a full site plan including all fire apparatus access roads. Final fire and life safety conditions will be addressed when the Fire Department reviews these plans. These conditions will be based on California Fire Code, California Building Code (CBC), and related codes/standards adopted at the time of construction plan submittal.

Contact our office for submittal instructions.

080 - Fire Hazardous Vegetation and Fuel Management Plan Inspection

An inspection of the requirements of the final Hazardous Vegetation and Fuel Management Plan is required before permit issuance. Contact our office for instructions regarding this inspection.

080 - Fire Water Verification

The required water system, including all fire hydrant(s), shall be installed, and accepted by the appropriate water agency and the Riverside County Fire Department prior to any combustible building material placed on an individual lot. Contact the Riverside County Fire Department to inspect the required fire flow, street signs, all weather surface, and all access and/or secondary access. Approved water plans must be at the job site.

080 - Survey RCTD-USE - Survey Monumentation

Prior to construction, if survey monuments including centerline monuments, tie points, property corners and benchmarks found it shall be located and tied out and corner records filed with the County Surveyor pursuant to Section 8771 of the Business & Professions Code. Survey points destroyed during construction shall be reset, and a second corner record filed for those points prior to completion and acceptance of the improvements.

080 - Transportation 80 - TRANSPORTATION - Grading – Design Intent: Cemetery Cut and Fill Slope Landscape Only

Grading - Design Intent: Cemetery Cut and Fill Slope Landscape Only

Where applicable, landscape areas requiring slope stabilization shall be assessed during construction by the following parties: geotechnical engineer, civil engineer, county landscape inspector and/or county grading inspector. When evidence exists that the slope landscape design is inadequate, the parties listed shall decide whether modifications are necessary as a result of changed conditions. In making such a decision, the following shall be adhered to (Building & Safety Erosion Control Standards):

- 4:1 Slopes
  - 5-15 gallon trees & 1- 5 gallon shrubs
- 2:1 Slopes
  - 15-24 gallon trees & 1-5 gallon shrubs

The permit / applicant shall be required to attain approval and record any changes that may occur between preliminary design and the start of construction.

080 - Transportation 80 - TRANSPORTATION - Landscape Common Area CCRs Landscape Common Area CCRs

The developer/ permit holder shall:

~~Prior to map recordation,~~ the developer/permit holder shall submit Covenants, Conditions, and Restrictions (CC&R) to the Riverside County Counsel for review along with the required fees set forth by the Riverside County Fee Schedule.

CORRECTION MADE with Transportation 12-6-2024 – edit concurred with Kevin T.

For purposes of landscaping and maintenance, the following minimum elements shall be incorporated into the CC&R's:

1) Permanent public, quasi-public or private maintenance organization shall be established for proper management of the water efficient landscape and irrigation systems. Any agreements with the maintenance organization shall stipulate that maintenance of landscaped areas will occur in accordance with Ordinance No. 859 (as adopted and any amendments thereto) and the County of Riverside Guide to California Friendly Landscaping.

2) The CC&R's shall prohibit the use of water-intensive landscaping and require the use of low water use landscaping pursuant to the provisions of Ordinance No. 859 (as adopted and any amendments thereto).

3) The common maintenance areas shall include all those identified on the approved landscape maintenance exhibit.

The Transportation Department, Landscape Section shall clear this condition once a copy of the County Counsel approved CC&R's has been submitted to the Transportation Department, Landscape Section.

080 - Transportation 80 - TRANSPORTATION - Landscape Inspection Deposit Required Landscape Inspection Deposit Required

This condition applies to both onsite and offsite (ROW) landscaping:

The developer/ permit holder shall:

Prior to building permit issuance, the developer/permit holder shall verify all plan check fees have been paid and deposit sufficient funds to cover the costs of the required landscape inspections associated with the approved landscape plans. The deposit required for landscape inspections shall be determined by the Transportation Department, Landscape Section. The Transportation Department, Landscape Section shall clear this condition upon determination of compliance.

080 - Transportation 80 - TRANSPORTATION - Landscape Plot Plan/Permit Required Landscape Plot Plan/Permit Required

This condition applies to both onsite and offsite (ROW) landscaping:

The developer/ permit holder shall:

Prior to issuance of building permits, the developer/permit holder shall apply for a Plot Plan (Administrative/PPA) Landscape Permit (LSP) or Landscape Plot Plan (LPP) from TLMA Land Use along with applicable deposit (plan check and inspection are DBF fees).

Provide construction level landscape plans in PDF (all sheets compiled in 1 PDF file), along with an electronic transmittal memo in PDF (include Owner contact, Developer, if not the same as the owner, Project manager, person or persons most likely to inquire about the status of the plans, Landscape Architect, Principal or LA signing the plans, Landscape Architect, Project Manager, person responsible for making the corrections, if different from above), and a current set of grading plans in PDF, and submit all three PDF files on a CD (compact Disc) with application. The landscape plans shall be prepared in a professional manner by a California Licensed/Registered Landscape Architect and signed/stamped by such.

Drawings shall be completed on County standard Transportation Department title block, plan sheet format (24 inch x 36 inch), 1:20 scale, north arrow, limit of work lines, hardscape features, graphic scale, and street names, etc. The landscaping plans shall be in conformance with the APPROVED EXHIBITS; in compliance with Ordinance No. 348, Section 18.12; Ordinance No. 859; and, be prepared consistent with the County of Riverside Guide to California Friendly Landscaping. At minimum, plans shall include the following components:

1) Landscape and irrigation working drawings (stamped) by a California certified/registered landscape architect;

2) Weather-based controllers and necessary components to eliminate water waste;

3) A copy of the (stamped) approved grading plans; and,

4) Emphasis on native and drought tolerant species.

When applicable, plans shall include the following components:

1) Identification of all common/open space areas;

2) Natural open space areas and those regulated/conserved by the prevailing MSHCP and or ALUC;

3) Shading plans for projects that include parking lots/areas;

4) The use of canopy trees (24 inch box or greater) within the parking areas;

5) Landscaping plans for slopes exceeding 3 feet in height;

6) Landscaping and irrigation plans associated with entry monuments. All monument locations shall be located outside of the ROW and dimensions shall be provided on the plan; and/or,

7) If this is a phased development, then a copy of the approved phasing plan shall be submitted for reference.

Please reference Landscape Plan Checklists available online at RCTLMA.org.

NOTE: When the Landscaping Plot Plan is located within a special district such as LMD/CSA/CFD or Valleywide, the developer/permit holder shall submit plans for review to the appropriate special district for simultaneous review. The permit holder shall show evidence to the Transportation Department, Landscape Section that the subject district

has approved said plans. Water Districts such as CVWD, TVWD, and EMWD may be required to approve plans prior to County approval.

Upon verification of compliance with this condition and the APPROVED EXHIBITS, the Transportation Department, Landscape Section shall clear this condition.

080 - Transportation RCTD-USE - Annexation into a Maintenance District

The project proponent shall comply with County requirements within public road rights-of-way, in accordance with Ordinance No. 461.11. The project proponent shall provide assurance of maintenance of various facilities within the public road right-of-way by completing the annexation process with the applicable maintenance entity/district(s) for annexation into the Landscaping and Lighting Maintenance District No. 89-1-Consolidated by contacting the Transportation Department at (951) 955-6767, and/or any other maintenance district approved by the Transportation Department or by processing and filing a Landscape Maintenance Agreement as directed by the Transportation Department Plan Check Division. Said annexation may include the following:

(1) Landscaping.

(2) Streetlights.

(3) Graffiti abatement of walls and other permanent structure(s).

(4) Street sweeping.

(5) WQMP BMP(s) or catch basin inserts.

For street lighting, the project proponent shall contact the Transportation Department L&LMD 89-1-C Administrator and submit the following:

(1) Completed Transportation Department application.

(2) Appropriate fees for annexation.

(3) Two (2) sets of street lighting plans approved by Transportation Department.

(4) Streetlight Authorization form from SCE, IID or other electric provider.

or as approved by the Director of Transportation.

080 - Transportation RCTD-USE - Approved Maintenance Exhibit (ME)

The Project shall submit a Maintenance Exhibit (ME) for approval, on two (2) 11 in x17 in hard copies and two (2) CD copies to County or Valley-Wide Recreation and Park District. The ME shall show, with applicable quantities (i.e. square footage, or lengths), potable and recycled water meters, irrigated landscaped areas, non-irrigated landscaping, open space, trails and pedestrian pathways, WQMP related BMPs, basin bottoms, fence and walls, graffiti, weed abatement, traffic signals, and any other feature that may require permanent maintenance (e.g. storm drains, low flow drains, community buildings, restrooms, parking lots, block walls, and fencing) with the entities proposed to provide maintenance. All right-of-way areas shall be separately delineated. The ME shall have the engineer's certification for square footage calculations and note the

proposed maintenance entity responsible for all maintenance activities, including those that cannot be depicted on the exhibit (e.g. street sweeping, etc.).

The Transportation Department will clear this condition after the ME is approved by the County, Valley-Wide Recreation and Park District, and/or other associated public/quasi-public maintenance entities. The approved ME shall be provided to the Transportation Department, three (3) 11 in x 17 in hardcopies and one fully signed PDF copy on CD.

Note: Landscaping in the road right-of-way shall be maintained by a public or quasi-public entity, as approved by the Transportation Department, Landscape Division. To ensure water quality compliance, the County discourages the use of HOAs for maintaining WQMP related BMPs. County Policy B-12 limits the total tax burden. Tax burden includes Community Facility Districts (CFDs), Assessment District, ad valorem taxes, any other assessments, taxes, and fees. The local water purveyor may require the use of reclaimed water for landscaping, prior to approving water improvement plans. ME shall be approved prior to submitting CC&R's, and submitting water improvement plans.

080 - Transportation RCTD-USE - Landscaping Design Plans

Landscaping within public road right of-way shall comply with Transportation Department standards, Ordinance No. 461.11, Comprehensive Landscaping Guidelines & Standards, and Ordinance No. 859 and shall require approval from the Transportation Department.

Landscaping plans shall be designed within the streets associated with the development and submitted to the Transportation Department. Landscaping Plans shall be submitted on standard County format (24 in x 36 in).

Landscaping plans shall be coordinated with the street improvement plans. or as approved by the Director of Transportation.

080 - Transportation RCTD-USE - Lighting Plan

A separate street light plan and/or a separate bridge light plan shall be approved by the Transportation Department. Street and/or bridge lighting plan(s) shall be designed in accordance with County Streetlight Specification Chart found in Specification Section 22 of Ordinance No. 461.11. For projects within SCE boundaries use County of Riverside Ordinance No. 461.11, Standard No. 1000. For projects within Imperial Irrigation District (IID) jurisdiction, the project shall use IID pole standard.

080 - Transportation RCTD-USE - Road Improvements (Plan)

Improvements plans for the following roadways shall be submitted for review and approval.

IRREVOCABLE RIGHT OF WAY DEDICATION

THEDA STREET is designated as a SECONDARY HIGHWAY in the County general plan and shall dedicate 100 FT full-with right of way per the County Standard No 94, and per the approved THEDA STREET ALIGNMENT STUDY on file with the County.

CORRECTION MADE 12-6-2024 – edit concurred with Kevin T.

EXISTING MAINTAINED

GARFIELD ROAD west of the project is County-maintained road designated as a local street and shall install cul-de-sac improvement, using 36 FT full-width pavement, install 6 in curb and gutter and 6 FT sidewalk at curb adjacent on 60 FT full-width dedicated right-of-way in accordance with County Standard No. 800, Ordinance No. 461.11. The existing pavement shall be reconstructed; or resurfacing as determined by the Transportation Department

NOTE:

1. Install two 24 FT wide residential driveways at the east end of the cul-de-sac to accommodate project entry/exit private street per the County Standard No 207.

2. Onsite gate shall be placed at a minimum 35 FT from the cul-de-sac flowline.

   CORRECTION MADE 12-6-2024 – edit concurred with Kevin T. 30'.

3. Install an 18 FT (min.) wide residential driveway at the north curb for access driveway along the west project boundary per the County Standard No 207.

4. Install an 18 FT (min.) wide residential driveway at the south curb for access driveway along the west project boundary per the County Standard No 207.

5. Provide pavement transition, using 10 length to 1 wide taper ratio to join existing edge of pavement.

ACCESS DRIVEWAY

Provide 18 FT (min.) full-width gravel road within 21 FT access easement, north of Garfield Road, along the project west boundary to allow access for APN 349-170-001.

Provide 18 FT (min.) full-width gravel road within 21 FT access easement, south of Garfield Road, along the project west boundary to allow access for APN 349-180-026 and APN 349-180-034.

The Project shall provide/acquire sufficient dedicated public right-of-way, environmental clearances, and signed approval of all street improvement plans for the above improvements. The limits of the improvements shall be consistent with the approved tentative map unless otherwise specified in these conditions. Should the applicant fail to acquire the necessary off-site right of way, the map will be returned for redesign.

or as approved by the Director of Transportation.

080 - Transportation RCTD-USE - Utility Plan

All electrical power, telephone, communication, street lighting, and cable television lines shall be designed to be placed underground on the Improvement Plans in accordance with Ordinance No. 460 for subdivisions and/or Ordinance No. 461.11 for road improvements. This also applies to all overhead lines 34 kilovolts or below along the project frontage and all offsite overhead lines in each direction of the project site to the nearest offsite pole. The Project shall coordinate with the serving utility companies to complete the final installations. This condition will be cleared after both of the following requirements are met:

_ The Street Improvement Plans are approved.

_ Transportation Department receives written proof that the Project has filed an application for the relocation of said utilities or said utility companies have initiated their relocation design.

CORRECTION MADE 12-6-2024 – edit concurred. Hardship letter provided to transportation division 1-10-2025. Concurred with Kevin T. 1-16-2025

080 - Transportation RCTD-USE-WQ - ESTABLISH WQMP MAINT ENTITY

A maintenance plan and signed WQMP/BMP maintenance agreement shall be submitted to the Transportation Department shall be approved and recorded against the property. A maintenance organization will be established with a funding source for the permanent maintenance.

080 - Transportation RCTD-USE-WQ - IMPLEMENT WQMP

The Project shall construct BMP facilities described in the approved Final County WQMP prior to the issuance of a building permit to the satisfaction of County Grading Inspection Section. The Project is responsible for performing all activities described in the County WQMP and that copies of the approved Final County WQMP are provided to future owners/occupants.

080 - Waste Resources Waste - Recyclables Collection and Loading Area

Prior to issuance of a building permit, the applicant shall submit one electronic (1) copy of a Recyclables Collection and Loading Area plot plan to the Riverside County Department of Waste Resources for review and approval to WastePlanning@rivco.org. The plot plan shall conform to Design Guidelines for Recyclables Collection and Loading Areas, provided by the Department of Waste Resources (found at http://www.rcwaste.org/business/planning/design) and shall show the location of and access to the collection area for recyclable materials, shall demonstrate space allocation for trash, recyclable materials, and organics and have the adequate signage indicating the location of each bin in the trash enclosure. The project applicant is advised that clearance of the Recyclables Collection and Loading Area plot plan only satisfies the Waste Resources' conditions for Recyclables Collection and Loading Areas space allocation and other Recyclables Collection and Loading Area Guideline items. Detailed drawings of the Trash Enclosure and its particular construction details, e.g., building materials, location, construction methods etc., should be included as part of the Project plan submittal to the Riverside County Department of Building and Safety.

080 - Waste Resources Waste Recycling Plan

Prior to building permit issuance, a Waste Recycling Plan (WRP) – Form B shall be submitted to the Riverside County Department of Waste Resources for review and approval to WastePlanning@rivco.org. A copy of Form B can be found at (https://www.rcwaste.org/Waste-Guide/CandD). At a minimum, the WRP must identify the materials (i.e., concrete, asphalt, wood, etc.) that will be generated by construction and development, the projected amounts, the measures/methods that will be taken to recycle, reuse, and/or reduce the amount of materials, the facilities and/or haulers that will be utilized, and the targeted recycling or reduction rate. During project construction, the project site shall have, at a minimum, two (2) bins: one for waste disposal and the

other for the recycling of Construction and Demolition (C&D) materials. Additional bins are encouraged to be used for further source separation of C&D recyclable materials. Accurate record-keeping (receipts) for recycling of C&D recyclable materials and solid waste disposal must be kept. Arrangements can be made through the franchise hauler.

090 - BS-Grade CURBS ALONG PLANTERS

A six-inch-wide curb with a twelve (12) inch wide walkway shall be constructed along planters on end stalls adjacent to automobile parking areas. Public parking areas shall be designed with permanent curb, bumper, or wheel stop or similar device so that a parked vehicle does not overhang required sidewalks, planters, or landscaped areas.

090 - BS-Grade PRECISE GRADE APPROVAL

Prior to final building inspection, the applicant shall obtain precise grade approval and/or clearance from the Building and Safety Department. The Building and Safety Department must approve the precise grading of your project before a building final can be obtained. Precise Grade approval can be accomplished by complying with the following:

1. Requesting and obtaining approval of all required grading inspections.

2. Submitting a “Wet Signed” copy of the Grading Report from the Soils Engineer (registered geologist or certified geologist, civil engineer or geotechnical engineer as appropriate) for the sub-grade and base of all paved areas.

3. Submitting a “Wet Signed” copy of the Sub-grade (rough) Certification from a Registered Civil Engineer certifying that the sub-grade was completed in conformance with the approved grading plan.

4. Submitting a “Wet Signed” copy of the Precise (Final) Grade Certification for the entire site from a Registered Civil Engineer certifying that the precise grading was completed in conformance with the approved grading plan.

Prior to release for building final, the applicant shall have met all precise grade requirements to obtain Building and Safety Department clearance.

090 - Transportation 90 - TRANSPORTATION - Landscape Inspection and Drought Compliance Landscape Inspection and Drought Compliance

This condition applies to both onsite and offsite (ROW) landscaping:

The developer/ permit holder shall:

The developer/permit holder shall coordinate with their designated landscape representative and the Transportation Department landscape inspector to ensure all landscape planting and irrigation systems have been installed in accordance with APPROVED EXHIBITS, landscaping, irrigation, and shading plans. The Transportation Department will ensure that all landscaping is healthy, free of weeds, disease and pests; and, irrigation systems are properly constructed and determined to be in good working order. The developer/permit holder's designated landscape representative and the Transportation Department landscape inspector shall determine compliance with this condition and execute a Landscape Certificate of Completion. All landscape inspection deposits and plan check fees shall be paid.

Upon determination of compliance, the Transportation Department, Landscape Section shall clear this condition.

090 - Transportation RCTD-USE - Complete Landscaping Installation

Landscaping within public road right-of-way shall comply with Transportation Department standards and Ordinance No. 461.11 and shall require approval by the Transportation Department. Landscaping shall be installed along the streets associated with this development. Landscaping within public road right-of-way shall comply with Transportation Department standards, policies, guidelines, and Ordinance No. 461.11 and shall require the approval from the Transportation Department or as approved by the Director of Transportation.

090 - Transportation RCTD-USE - Regional Transportation Fees

Prior to the time of issuance of a Certificate of Occupancy or upon final inspection, whichever occurs first, the Project shall pay fees in accordance with the fee schedule in effect at the time of payment:

_All Transportation Uniform Mitigation Fees (TUMF) in accordance with Ordinance 824.

090 - Transportation RCTD-USE - Road Improvements (Installation)

The following roadways shall be constructed in accordance with approved improvement plans.

IRREVOCABLE RIGHT OF WAY DEDICATION

THEDA STREET is designated as a SECONDARY HIGHWAY in the County general plan and shall dedicate 100 FT full-with right of way per the County Standard No 94, and per the approved THEDA STREET ALIGNMENT STUDY on file with the County.

CORRECTION MADE 12-6-2024 – edit concurred with Kevin T.

EXISTING MAINTAINED

GARFIELD ROAD west of the project is County-maintained road designated as a local street and shall install cul-de-sac improvement, using 36 FT full-width pavement, install 6 in curb and gutter and 6 FT sidewalk at curb adjacent on 60 FT full-width dedicated right-of-way in accordance with County Standard No. 800, Ordinance No. 461.11. The existing pavement shall be reconstructed; or resurfacing as determined by the Transportation Department

NOTE:

1. Install two 24 FT wide residential driveways at the east end of the cul-de-sac to accommodate project entry/exit private street per the County Standard No 207.

2. Onsite gate shall be placed at a minimum 35 FT from the cul-de-sac flowline.

   CORRECTION MADE 12-6-2024 – edit concurred with Kevin T. 30’

3. Install an 18 FT (min.) wide residential driveway at the north curb for access driveway along the west project boundary per the County Standard No 207.

4. Install an 18 FT (min.) wide residential driveway at the south curb for access driveway along the west project boundary per the County Standard No 207.

5. Provide pavement transition, using 10 length to 1 wide taper ratio to join existing edge of pavement.

ACCESS DRIVEWAY

Provide 18 FT (min.) full-width gravel road within 21 FT access easement, north of Garfield Road, along the project west boundary to allow access for APN 349-170-001.

Provide 18 FT (min.) full-width gravel road within 21 FT access easement, south of Garfield Road, along the project west boundary to allow access for APN 349-180-026 and APN 349-180-034.

The Project shall provide/acquire sufficient dedicated public right-of-way, environmental clearances, and signed approval of all street improvement plans for the above improvements. The limits of the improvements shall be consistent with the approved tentative map unless otherwise specified in these conditions. Should the applicant fail to acquire the necessary off-site right of way, the map will be returned for redesign.

090 - Transportation RCTD-USE - Streetlight Installation

Install streetlights along the streets associated with development in accordance with the approved street lighting plan and standards of County Ordinances No. 461.11.

Streetlight annexation into L&LMD or similar mechanism as approved by the Transportation Department shall be completed.

It shall be the responsibility of the developer to ensure that streetlights are energized along the streets associated with this development where the developer is seeking Building Final Inspection (Occupancy).

090 - Transportation RCTD-USE - Utility Installation

Electrical power, telephone, communication, street lighting, and cable television lines shall be installed underground in accordance with Ordinance Nos. 460 and 461.11, or as approved by the Transportation Department. This also applies to all overhead lines 34 kilovolts or below along the project frontage and all offsite overhead lines in each direction of the project site to the nearest offsite pole. A certificate should be obtained from the pertinent utility company and submitted to the Department of Transportation as proof of completion for clearance.

In addition, the Project shall ensure that streetlights are energized and operational along the streets of those lots where the Project is seeking Building Final Inspection (Occupancy).

CORRECTION MADE 12-6-2024 – edit concurred. Hardship letter provided to transportation division 1-10-2025. Concurred with Kevin T. 1-16-2025

090 - Transportation RCTD-USE-WQ - WQMP COMPLETION

Prior to Building Final Inspection, the Project is required to furnish educational materials regarding water quality to future owners/occupants, provide an engineered WQMP

certification, inspection of BMPs, GPS location of BMPs, ensure that the requirements for inspection and cleaning the BMPs are established, and for businesses registering BMPs with the Transportation Department's Business Storm Water Compliance Program Section.

090 - Waste Resources Waste - Recyclables Collection and Loading Area Inspection

Prior to final building inspection, the applicant shall construct the recyclables collection and loading area in compliance with the Recyclables Collection and Loading Area plot plan, as approved and verified through inspection by the Riverside County Department of Waste Resources.

090 - Waste Resources Waste Reporting Form and Receipts

Prior to building final inspection, a Waste Reporting Form (Form C) and evidence (i.e., receipts or other types of verification) demonstrating project compliance with the approved Waste Reporting Plan (WRP) shall be submitted by the project proponent to the Planning Section of the Riverside County Department of Waste Resources for review and approval at WastePlanning@rivco.org. Receipts must clearly identify the amount of waste disposed and Construction and Demolition (C&D) materials recycled. A copy of Form C can be found at (https://www.rcwaste.org/Waste-Guide/CandD).

**ADVISORY NOTICE DOCUMENT**

015 - BS-Plan Check Gen - Custom

Please provide construction type and comply with Chapter 5 General Building Heights and Areas. Please comply with Chapter 11B.

This project is located in high fire zone area. Chapter 7A of the building code shall apply. NOTIFICATIONS: CODE/ORDINANCE REQUIREMENTS: The applicant shall obtain the required building permit(s) from the building department prior to any construction on the property. All building plans and supporting documentation shall comply with current adopted 2022 California Building Codes, Riverside County Ordinances regulations in effect at the time of building plan submittal and fee payment to the Building Department. All Building Department plan submittal and fee requirements shall apply.

PERMIT ISSUANCE: Per section 105.1 (2022 California Building Code, CBC): Where any owner or authorized agent intends to construct, enlarge, alter , repair, move, demolish or change the occupancy of a building or structure, or to erect, install, enlarge, alter, repair, remove, convert, or replace any electrical, gas, mechanical, or plumbing system, the regulation of which is governed by this code, or to cause any such work to be done, shall first make application to the building official and obtain the required permit.

The applicant shall obtain the required building permit(s) from the building department prior to any construction or placement of any building, structure or equipment on the property. The applicant shall obtain an approved final building inspection and certificate of occupancy from the building department prior to any use or occupancy of the building, or structure. At no time shall the approval of the planning case exhibit allow for the construction or use of any building, structure, or equipment. In residential applications,

each separate structure will require a separate building permit. ACCESSIBLE PATH OF TRAVEL: 1- Please provide a revised site plan to indicate the required continuous accessible paved path of travel. The accessible path of travel details shall include; 1. Accessible path construction type (Asphalt or concrete). 2. Accessible path width. 3. Accessible path directional slope % and cross slope %. 4. All accessible ramp and curb cut-out locations and details where applicable. The Accessible path of travel shall: 1. Connect to the public R.O.W. 2. Connect to all building(s). 3. Connect to all accessible parking loading/unloading areas. 4. Connect to accessible sanitary facilities. 5. Connect to areas of public accommodation. Please be aware that the approved site plan with accessibility requirements should be included with any building plan submittal. The plan review staff may have additional comments depending on the additional information or revisions provided during the plan review process. Additional accessible requirements within the structure shall be reviewed during the building plan review.

2- Relocate the ADA parking to comply with the following: Parking spaces complying with 11B- 502 (Parking Spaces) that serve a particular building or facility shall be located on the shortest accessible route from parking to an entrance 3-Where parking serves more than one accessible entrance, parking spaces complying with 11B-502 (Parking Spaces) shall be dispersed and located on the shortest accessible route to the accessible entrances.

015 - E Health DEH - ECP COMMENTS

Based on the information provided in the environmental assessment documents submitted for this project and with the provision that the information was accurate and representative of site conditions, RCDEH-ECP (Riverside County Department of Environmental Health – Environmental Cleanup Program) concludes no further environmental assessment is required for this project.

If previously unidentified contamination or the presence of a naturally occurring hazardous material is discovered at the site, assessment, investigation, and/or cleanup may be required. Contact Riverside County Environmental Health - Environmental Cleanup Programs at (951) 955-8980, for further information.

015 - Fire General Fire Department Advisory Comments

With respect to the planning conditions for the referenced project, the fire department requires the following fire protection measures be provided in accordance with Riverside County Ordinances, the 2022 California Fire Code (CFC) as adopted and amended by the County of Riverside and/or recognized fire protection standards.

These conditions are preliminary and further review will be conducted upon receipt of additional entitlement and/or construction submittals. Additional requirements may be required based upon the adopted codes at the time of submittal.

1. Fire Protection Water Supplies/Fire Flow - Minimum fire flow for the construction of all buildings is required per CFC Appendix B. Prior to building permit issuance for new construction, the applicant shall provide documentation to show there exists a water system capable of delivering the required fire flow. Specific design features may increase or decrease the required fire flow. Reference CFC 507.3.

2. Fire Protection Water Supplies/Hydrants - The minimum number of fire hydrants required, as well as the location and spacing of fire hydrants, shall comply with CFC Appendix C and NFPA 24. Fire hydrants shall be located no more than 400 feet from all portions of the exterior of the building along an approved route on a fire apparatus access road, unless otherwise approved by the Fire Department. Fire hydrants shall be at least 40 feet from the building it is serving. A fire hydrant shall be located within 20 to 100 feet of the fire department connection for buildings protected with a fire sprinkler system. The size and number of outlets required for the approved fire hydrants are 4" x 2 ½" x 2 ½" (super hydrant). Reference CFC 507.5, CFC Appendix C and NFPA 24.

3. Fire Department Access - Fire apparatus access roads shall be provided to within 150 feet of all exterior portions of buildings, unless otherwise approved by the Fire Department. Fire apparatus access roads shall have an unobstructed width of not less than 24 feet. Dead-end fire apparatus access roads in excess of 150 feet shall be provided with an approved turn around. The minimum required turning radius of a fire apparatus access road is 38 feet outside radius and 14 feet inside radius. (For developments within the SRA and within the LRA VHFHSZ, the minimum required turning radius of a fire apparatus access road is 74 feet outside radius and 50 feet inside radius. See California Code of Regulations Title 14 Section 1273.04.) The construction of the fire apparatus access roads shall be all weather and capable of sustaining 80,000 lbs. Unless otherwise approved, the grade of a fire apparatus access road shall not exceed 16 percent and the cross slope shall not exceed 2.5 percent. The angles of approach and departure for fire apparatus access roads shall be a maximum of 6 percent grade change for 25 feet of approach/departure. Reference CFC 503.1.1, 503.2.1 as amended by the County of Riverside and Riverside County Office of the Fire Marshal Guidelines.

4. Fire Department Access Turn Around - Dead-end fire apparatus access roads in excess of 150 feet in length shall be provided with a bulb turnaround at the terminus measuring a minimum of 38 feet outside radius and 14 feet inside radius. (For development within the SRA and within the LRA VHFHSZ, the bulb turnaround at the terminus shall be 40 feet outside radius and 16 feet inside radius). Parallel parking around the perimeter of the bulb is acceptable provided the bulb outside turning radius is increased by 8 feet. In-lieu of a bulb, a hammer-head type turnaround is acceptable where the top of the "T" dimension is 120 feet with the stem in the center. Additional turnaround designs may be acceptable as approved by the Fire Department. Reference CFC 503.1.1, 503.2.1 as amended by the County of Riverside and Riverside County Office of the Fire Marshal Guidelines.

5. ~~Secondary Access – Unless otherwise approved by the Fire Department, dead end fire apparatus access roads shall not exceed (660 feet for Very High Fire Hazard Severity Zone and High Fire Hazard Severity Zone areas. 800 feet for Moderate Fire Hazard Severity Zone. 1,320 feet). Secondary egress/access fire apparatus access roads shall provide independent egress/access from/to the area or as otherwise approved by the Fire Department. Secondary egress/access fire apparatus access roads shall be as remote as possible from the primary fire apparatus access road to reduce the possibility that both routes will be obstructed by a single emergency. Additional fire apparatus access roads based on the potential for impairment by vehicle congestion, condition of~~

~~terrain, climatic conditions, anticipated magnitude of a potential incident, or other factors that could limit access may be required by the Fire Department. Reference CFC 503.1.2 and Riverside County Office of the Fire Marshal Guidelines.~~

CORRECTION MADE 12-10-2024 – edit concurred Dave Myers, 12-12-2024 revised.

Secondary Access – For the existing Parcel shall be in accordance with 14 CCR § 1273.0. The maximum length of a Dead-end Road, including all Dead-end Roads accessed from that Dead-end Road, shall not exceed the following cumulative lengths, regardless of the number of parcels served:

- parcels zoned for less than one acre - 800 feet
- parcels zoned for 1 acre to 4.99 acres - 1,320 feet
- parcels zoned for 5 acres to 19.99 acres - 2,640 feet
- parcels zoned for 20 acres or larger - 5,280 feet

All lengths shall be measured from the edge of the Road surface at the intersection that begins the Road to the end of the Road surface at its farthest point. Where a dead-end road crosses areas of differing zoned parcel sizes requiring different length limits, the shortest allowable length shall apply.

6. Fire Department Building Construction Plan Review - Submittal of construction plans to the Fire Department will be required. Final fire and life safety conditions will be addressed when the Fire Department reviews the plans. These conditions will be based on California Fire Code, California Building Code (CBC), and related codes/standards adopted at the time of construction plan submittal. Reference CFC 105.1.

7. Fire Sprinkler System - All new commercial buildings and structures 3,600 square feet or larger will be required to install a fire sprinkler system. Reference CFC 903.2 as amended by the County of Riverside.

8. Fire Alarm and Detection System - A water flow monitoring system and/or fire alarm system may be required as determined at time of building construction plan review. Reference CFC 903.4 and CFC 907.2.

9. Hazardous Vegetation and Fuel Management Plan - Projects in the Local Responsibility Area Very High Fire Hazard Severity Zone and the State Responsibility Area Very High, High and Moderate Fire Hazard Severity Zones shall provide a Hazardous Vegetation and Fuel Management Plan to be reviewed and approved by the Fire Department. (A preliminary plan shall be provided to and approved by the Fire Department prior to any new parcel map recordation.) Reference CFC 4906.3

10. Materials and Construction Methods for Exterior Wildfire Exposure - Projects in the Local Responsibility Area Very High Fire Hazard Severity Zone and the State Responsibility Area Very High, High and Moderate Fire Hazard Severity Zones shall comply with Chapter 7A of the California Building Code and

California Code of Regulations, Title 14 Fire Safety Regulations. Reference CFC 4905.2.

11. Traffic Calming Devices - Requests for installation of traffic calming designs/devices on fire apparatus access roads shall be submitted and approved by the Fire Code Official. Reference CFC 503.4.1.

12. Gate Access: All electronically operated gates shall be provided with Knox key switches and automatic sensors for access. These gates shall be provided with access to gate equipment or another method to open the gate if there is a power failure. (Manual gates shall not be locked unless a Knox Box containing the key to the lock is installed in an approved location on the approach side of the gate). A pedestrian gate, if used to provide access, shall be a minimum 3 feet wide and provided with a Knox Box/Padlock if locked. Reference CFC 506.1.

13. Water Plans: If fire hydrants are required to be installed, applicant/developer shall furnish the water system fire hydrant plans to the Fire Department for review and approval prior to building permit issuance. Plans shall be signed by a registered civil engineer, and shall confirm hydrant type, location, spacing, and minimum fire flow. Once plans are signed and approved by the local water authority, the originals shall be presented to the Fire Department for review and approval. Reference CFC 105.4.1.

015 - Fire High Fire SRA

Project/property is in a High Fire Hazard, State Responsibility Area are required, in addition to County Ordinance, to comply with all provisions of the State Board of Forestry, California Code of Regulations, Title 14. A high fire mitigation plan or report will be required. Any habitat conservation issue affecting the Fire Department Fuel Modification requirements, shall have concurrence with the responsible wildlife and/or other conservation agency.

015 - Fire Secondary Egress from a High Fire Hazard

To have adequate evacuation times from a project/property that is within High/Very High Fire Hazard area, road(s) further than 660 feet shall have secondary or alternative access to a publicly maintain circulatory road(s) per Ordinance 460.

No secondary access required 12-10-2024 as discussed. Concurrence on condition, Dave Myers.

015 - Flood INCREASED RUNOFF CRITERIA

The development of this site would increase peak flow rates on downstream properties. Mitigation shall be required of offset such impacts. An increased runoff basin shall be shown on the exhibit and calculations supporting the size of the basin shall be submitted to the District for review. The entire area of proposed development will be routed through a detention facility to mitigate increased runoff. All basins must have positive drainage; dead storage basins shall not be acceptable.

Storms to be studied will include the 1-hour, 3-hour, 6-hour and 24-hour duration events for the 2-year, 5-year, and 10-year return frequencies. Detention basin(s) and outlet(s) sizing will ensure that none of these storm events has a higher peak discharge in the post-development condition than in the pre-development condition.

For the 2-year and 5-year events, the loss rate will be determined using an AMC I condition. For the

10-year event, AMC II will be used. Constant loss rates shall be used for the 1-hour, 3-hour, and 6-hour events. A variable loss rate shall be used for the 24-hour event.

Low Loss rates will be determined using the following:

1. Undeveloped Condition --> LOW LOSS = 90%

2. Developed Condition --> LOW LOSS = .9 - (.8 X % IMPERVIOUS)

3. Basin Site --> LOW LOSS = 10%

Where possible and feasible, the on-site flows should be mitigated before combining with off-site flows to minimize the size of the detention facility required. If it is necessary to combine off-site and on-site flows into a detention facility two separate conditions should be evaluated for each duration/return period/before-after development combination studied; the first for the total tributary area (off-site plus

on-site), and the second for the area to be developed alone (on-site). It must be clearly demonstrated that there is no increase in peak flow rates under either condition (total tributary area or on-site alone), for each of the return period/duration combinations required to be evaluated.

No outlet pipe(s) shall be less than 18" in diameter. Where necessary an orifice plate may be used to restrict outflow rates. Appropriate trash racks shall be provided for all outlets less than 48" in diameter. The basin(s) and outlet structure(s) must be capable of passing the 100-year storm without damage to the facility. Basins shall be designed per Appendix C – Basin Guidelines of Design Handbook for Low Impact Development Best Management Practices.

Mitigation basins should be designed for joint use and be incorporated into open space or park areas. Side slopes should be no steeper than 4:1 and depths should be minimized where public access is uncontrolled.

**Preliminary sizing may be based on the difference in runoff hydrograph volume between the "developed" condition and the "pre-developed" condition for the 24-hour duration event for the 10-year return frequency. Final design of the basin, including a complete hydrology study will not be required until the improvement plan stage of this development. The project may need modifications at the plan check stage in order to comply with the increased runoff criteria.

015 - Planning 15 - PLANNING - Landscape Requirement Landscape Requirement

This condition applies to both onsite and offsite (ROW) landscaping:

The developer/ permit holder shall:

1) Ensure all landscape and irrigation plans are in conformance with the APPROVED EXHIBITS;

2) Ensure all landscaping is provided with California Friendly landscaping and a weather-based irrigation controller(s) as defined by County Ordinance No. 859;

3) Ensure that irrigation plans which may use reclaimed water conform with the requirements of the local water purveyor; and,

4) Be responsible for maintenance, viability and upkeep of all slopes, landscaped areas, and irrigation systems until the successful completion of the twelve (12) month inspection or those operations become the responsibility of the individual property owner(s), a property owner's association, or any other successor-in-interest, whichever occurs later.

To ensure ongoing maintenance, the developer/ permit holder or any successor-in-interest shall:

1) Connect to a reclaimed water supply for landscape irrigation purposes when reclaimed water is made available.

2) Ensure that landscaping, irrigation and maintenance systems comply with the Riverside County Guide to California Friendly Landscaping, and Ordinance No. 859.

3) Ensure that all landscaping is healthy, free of weeds, disease and pests.

015 - Planning-GEO Gen - Custom

County Geologic Report GEO No. 230055, submitted for the project CUP230002, was prepared by RGS Engineering Geology under Soil Exploration Company, Inc. and is titled “Limited Geotechnical Feasibility Report, Proposed Crescent Gardens Cemetery, Garfield Road at Robert Street, Meadowbrook Area, Riverside County, California”, dated February 20, 2021. In addition, RGS Engineering Geology prepared “Response to County Review Comments, Limited Geotechnical Feasibility Report, Proposed Crescent Gardens Cemetery, Garfield Road at Robert Street, Meadowbrook Area, Riverside County, California, Project No. 1789-01” dated January 26, 20024.

GEO230055 concluded:

1. Geologic hazards related to ground rupture hazard, liquefaction, earthquake induced settlement, and landslide hazard are low to nil.

2. Excavation characteristics are moderate within the granitic bedrock and poor within the metamorphic bedrock and some areas may be unusable as gravesites in the end unless blasting or some equivalent method of rock breaking is used.

3. On-site sewage disposal associated with the mortuary and assembly halls within the cemetery is also considered feasible, provided the leach field is located within decomposed granitic bedrock.

GEO230055 recommended:

1. Excavation of the excessively hard bedrock and replacement as fill material that can be readily excavated for gravesites as needed.

2. To achieve maximum infiltration of storm water, detention basins should be planned within the decomposed granite bedrock which occurs across the northwestern site area.

3. Additional percolation testing will be needed for design and approval of the septic systems.

It should be noted that no engineering review of this report or formal review of provided building code information are a part of this review. Formal review of engineering design and code data will be made by the County of Riverside, as appropriate, at the time of grading and/or building permit submittal to the County.

015 - Planning-PAL Gen - Custom

County Paleontological Report (PDP) No. 230013, submitted for this case CUP230002), was prepared by CRM Tech and is entitled: "Paleontological Resource Assessment Report, Crescent Gardens Cemetery Project, Assessor's Parcel Numbers 349-170-003 to -007; -009 to -013; 349-180-002, -004 to -008, -016, -020 and -035, Meadowbrook Area of Riverside County, California, CUP230002", dated August 28, 2023.

PDP230013 concluded:

1. The potential to impact significant, nonrenewable paleontological resources is low expect in the old alluvial-channel deposits in the mid-south-southeastern corner of the project area.

2. The project's potential to impact significant nonrenewable paleontological resources in the old alluvial-channel deposits appears to be high.

PDP230013 recommended:

1. A paleontological resource impact mitigation program be developed and implemented prior to beginning of the project to prevent impacts or reduce them to a level less than significant only within the old alluvial channel deposits in the mid-south-southeastern portion of the project area.

2. Paleontological monitoring is not recommended/required in other parts of the project area.

PDP230013 satisfies the requirement for a Paleontological Resource Assessment for CEQA purposes. PDP0230013 is hereby accepted for CUP230002. A PRIMP shall be required prior to issuance of a grading permit for this project.

In addition, per the County's SABER (Safeguard Artifacts Being Excavated in Riverside County) Policy, paleontological fossils found in the County of Riverside should, by preference, be directed to the Western Science Center in the City of Hemet.

015 - Transportation RCTD-USE - General Transportation Conditions

With respect to the conditions of approval for the referenced ~~tentative~~ exhibit, the land divider shall provide all street improvements, street improvement plans and/or road dedications set forth herein in accordance with the Riverside County Road Improvement Standards (Ordinance No. 461.11). It is understood that the exhibit

correctly shows acceptable centerline elevations, all existing easements, traveled ways, and drainage courses with appropriate Qs, and that their omission or unacceptability may require the exhibit to be resubmitted for further consideration. The County of Riverside applicable ordinances and all conditions of approval are essential parts and a requirement occurring in ONE is as binding as though occurring in all. All questions regarding the true meaning of the conditions shall be referred to the Transportation Department.

There is no Tentative Parcel Map. Map application was withdrawn.

The Project shall submit a preliminary soils and pavement investigation report addressing the construction requirements within the road right-of-way.

A signing and striping plan is required for this project. The Project shall be responsible for any additional paving and/or striping removal caused by the striping plan or as approved by the Director of Transportation.

Alterations to natural drainage patterns shall require protecting downstream properties by means approved by the Transportation Department.

If the Transportation Department allows the use of streets for drainage purposes, the 10-year discharge shall be contained in the top of curb or asphalt concrete dikes, and the 100-year discharge shall be contained in the street right-of-way.

All corner cutbacks shall be applied per Standard No. 805, Ordinance 461.11, except for corners at Entry streets intersecting with General Plan roads, they shall be applied per Exhibit C of the Countywide Design Guidelines.

All centerline intersections shall be at 90-degrees, plus or minus 5-degrees.

At intersections, local streets (below County Collector Road Standard) shall have a minimum 50 FT tangent, measured from flowline/curb-face to the end of the 50 FT tangent section.

Vacating/abandoning excess public rights-of-way requires a separate request from the Project that is approved by the Board of Supervisors. If said excess public rights-of-way is also County owned land, it may be necessary to enter into an agreement with the County for its purchase or exchange.

The project shall comply with the most current ADA requirements. Ramps shall be constructed at all 4 legs of 4-way intersections and T-intersections per Standard No. 403, sheets 1 through 7 of Ordinance No. 461.11.

The off-site rights-of-way for access road(s) required by the project shall be accepted to vest title in the name of the public if not already accepted.

If any portion of the project is phased, the Project shall provide primary and secondary off-site access roads for each phase with routes to County maintained roads as approved by the Transportation Department.

No secondary access required 12-10-2024 as discussed with fire. Concurrence on condition, Dave Myers.

If there are previously dedicated public roads and utility easements that were not accepted by the County, the Project shall file a separate application to the County of Riverside, Office of the County Surveyor, for the acceptance of the existing dedications by resolution and bear all costs thereof.

Additional information, standards, ordinances, policies, and design guidelines can be obtained from the Transportation Department Web site: https://rctlma.org/trans/. If you have questions, please call the Plan Check Section at (951) 955-6527.

Improvement plans for the required improvements must be prepared and shall be based upon a design profile extending a minimum of 300 feet beyond the limit of construction at a grade and alignment as approved by the Riverside County Transportation Department. Completion of road improvements does not imply acceptance for maintenance by County. Street Improvement Plans shall comply with Ordinance No. 461.11, Riverside County Improvement Plan Check Policies and Guidelines, which can be found online http://rctlma.org/trans.

015 - Waste Resources Waste - General

Hazardous materials are not accepted at Riverside County landfills. In compliance with federal, state, and local regulations and ordinances, any hazardous waste generated in association with the project shall be disposed of at a permitted Hazardous Waste disposal facility. Hazardous waste materials include, but are not limited to, paint, batteries, oil, asbestos, and solvents. For further information regarding the determination, transport, and disposal of hazardous waste, please contact the Riverside County Department of Environmental Health, Environmental Protection and Oversight Division.

AB 341 focuses on increased commercial waste recycling as a method to reduce greenhouse gas (GHG) emissions. The regulation requires businesses and organizations that generate four or more cubic yards of waste per week and multifamily units of 5 or more, to recycle. A business shall take at least one of the following actions in order to reuse, recycle, compost, or otherwise divert commercial solid waste from disposal:

- Source separate recyclable and/or compostable material from solid waste and donate or self-haul the material to recycling facilities.
- Subscribe to a recycling service with their waste hauler.
- Provide recycling service to their tenants (if commercial or multi-family complex).
- Demonstrate compliance with the requirements of California Code of Regulations Title 14.

For more information, please visit:

www.rivcowm.org/opencms/recycling/recycling_and_compost_business.html#mandatory

Consider xeriscaping and using drought tolerant/low maintenance vegetation in all landscaped areas of the project.

The use of mulch and/or compost in the development and maintenance of landscaped areas within the project boundaries is recommended. Recycle green waste through either onsite composting of grass, i.e., leaving the grass clippings on the lawn, or sending separated green waste to a composting facility.

AB 1826 requires businesses and multifamily complexes to arrange for organic waste recycling services. Those subject to AB 1826 shall take at least one of the following actions in order to divert organic waste from disposal:

-Source separate organic material from all other recyclables and donate or self-haul to a permitted organic waste processing facility.

-Enter into a contract or work agreement with gardening or landscaping service provider or refuse hauler to ensure the waste generated from those services meet the requirements of AB 1826.

Comply with SB 1383 which establishes regulations to reduce organics waste disposal and went into effect on January 1, 2022. This law establishes methane emissions reduction targets in a statewide effort to reduce emissions of short-lived climate pollutants caused by organics waste disposal.

EVMWD Comments/Corrections (11/17/25 Email.

Refer to RTC Letter to EVMWD 12-16-2024):

1. Canyon Lake must be identified as a receiving water body, with designated beneficial uses including Municipal Drinking Water and full contact recreational uses

   Response: The proposed Crescent Garden Cemetery project (Project) being within the watershed of Canyon Lake will be added to discussions in Initial Study (IS) for CUP23002. The IS will reference in the project description, hydrology report, and Water Quality Management Plan (WQMP).

   The Project is more than 7,300 lineal feet west of the water body north of Canyon Lake. It is approximately 1.78 miles to the north of the nearest water body of Canyon Lake called Jump Lagoon, as shown in Figure 1- Vicinity to Canyon Lake.

2. Setback distances to adjacent streams (WOTUS) that drain to Canyon Lake must be specified

   Response: Project burial site pads are beyond the 25-foot setback from the 100-year floodplain boundaries as required for flood protection. Refer to Figure 2, Floodplain Exhibit

3. BMPs must be specified for addressing overflow and discharges from onsite treatment ponds to adjacent WOTUS, streams that drain to Canyon Lake

   Response: Refer to Preliminary Water Quality Management Plan Crescent Gardens revised June 18, 2024. Please note that there are no “on site treatment ponds” in this project. There are four (4) water quality/detention basins that are BMPs for treatment of stormwater runoff from impervious areas, in conformance to County’s Low Impact Development (LID) requirements for

mitigation of water quality and hydromodification. Please refer to Figure 3 Typical BMP Basin cross-section.

4. BMPs must be specified to address cemetery/grave sites Leachate (due to decomposition of buried bodies) from influencing adjacent WOTUS/streams that drain to Canyon Lake

Response: The gravesites will be approximately five feet below finish ground surface (including regulatory 18 “inches minimum topsoil). This shallow depth ensures that the grave does not impact the local water table. The water table in this area is approximately 147 feet below ground surface. (Leighton Geology Report, 5/31/2024) Refer to Figure 4 Typical Burial Section and Figure 5 from Initial Study.

The natural burial features employed in MMCC burial include:

- No embalming.
- No chemical like formaldehyde are used in ceremonial body washing and preparation.
- No casket. The deceased body is placed on ground in a cotton cloth shroud. This allows for a natural decomposition process of a human body.
- A liner is used in place of a vault; this ensures that body is placed on ground soil within the confinement of the biodegradable shroud.

5. Comments must be solicited from all Agencies that have Water Quality Regulatory Oversite for Canyon Lake, including SWRCB-DDW-Riverside District, Santa Ana RWQCB, City of Canyon Lake, LESJWA, and SAWPA.

Response: As discussed 12-10-2024, an IS will be circulated for agencies to comment during notice of preparation. During this time the above agencies will be contacted via circulation of the IS from Riverside County staff to collect comments. Preliminary meetings with select agencies will occur prior to circulation of the Initial Study.

Thank you for your attention in reviewing the response to comments.

Should you have any questions, please do not hesitate to contact me at (949) 768-2507.

Sincerely,

HUNSAKER & ASSOCIATES IRVINE, INC.

Robert K. Glessner
Sr. Planner

RKG:tl
W.O. 4427-2
(f\c\wo\4427\2 L01-rkg)