Environmental Justice Form

Applicability

Sites located within Environmental Justice boundaries have compatibility policies related to the environment and quality of life change as well as outreach. To address these policies:

1. Planning staff will review and evaluate your submittal and will note what policies are applicable to your proposed project and provide options for addressing the policies.
2. Community Outreach will be required to present the proposed project. Staff will assist in scheduling a meeting with the appropriate Community Council (CC), Community Advisory (CAC), or other form of outreach when the proposed project is not located within a MAC or CC boundary.

Development Process

Environmental Justice policies apply to proposed projects located within the designed EJ communities. You can see a map of applicable communities by using the Environmental Justice Mapping App and on Map My County. The digitized map depicts the EJ communities shown on Figure LU 4.1 of the Land Use Element of the General Plan. All discretionary approvals for the proposed projects including housing, and/or nonresidential uses including but to limited to commercial, services, industrial, agricultural, and nonprofit will be evaluated for compatibility with applicable policies.

1. **New development** within the Environmental Justice Communities.
2. **Discretionary requests** for development, including residential and/or nonresidential uses and development.

Directions

Please review the following checklist to analyze your project with respect to the Environmental Justice policies. Policies will include a response which note whether the project can is compatible with the Environmental Justice policy by Conditions of Approval, Mitigation Measures, or Project Design Features. The response may also note if a policy is not applicable. The following describes responses:

1. **Compatible Through Mitigation Measure or Condition of Approval:** The project meets the provision through a CEQA mitigation measure or the application of a Condition of Approval.
2. **Compatible Through Project Design Feature:** The project meets the provision through the implementation of a design feature.
3. **Policy Not Applicable: The** policy does not apply to the project. Some policies are not development orientated. The notes section may elaborate on why the policy is not applicable.
4. **Notes:** Elaborate and explain on the selection made in the checklist.

Important Documents and Links (Hyperlinked)

1. Environmental Justice Mapping App
2. Map My County
3. Policies
4. Implementation Plan
5. Proposed Affected Areas

Health Risk Reduction

	Mitigation Measure or Condition of Approval	Project Design Feature	Policy Not Applicable	Notes (250-word max per response)
HC 16.5 – Location to Sensitive Receptors. *Evaluate the compatibility of unhealthy and polluting land uses being located near sensitive receptors including possible impacts on ingress, egress, and access routes. Similarly, encourage sensitive receptors, such as housing, schools, hospitals, clinics, and childcare facilities to be located away from uses that pose potential hazards to human health and safety.*	☐	☐	☒	Policy not applicable. There is no health risk caused by proposed land use. This project does not impact sensitive receptors (residential neighborhood). Proposed use is cemetery, chapel, mortuary, and caretaker residence. Cultural resources are to be coordinated with Bureau of Indian Affairs as deemed appropriate. Upon discoveries appropriate mitigations will be applied.
HC 16.6 – Good Neighbor Policy. *For large scale logistics, warehouse and distribution projects, address the Good Neighbor Policy for Logistics and Warehouse/Distribution uses criteria adopted by the Board of Supervisors on November 19, 2019, and as may be subsequently amended.*	☐	☐	☒	Policy not applicable. This project is not logistics, warehouse, or distribution projects.
HC 16.10 – Compact Development. *Plan for compact development projects in appropriate locations, including in existing communities and the clustering of affordable and mixed-income housing therein, that make the most efficient use of land and concentrate complementary uses close to transit or non-transit mobility options and advocate for expanded transit and non-transit mobility options to serve such areas.*	☐	☒	☐	Policy not applicable as it is not a residential development. As being good neighbors to the community, the applicant is contributing to the public mass transit system by providing a proposed bus shelter within the Meadowbrook community. Discussion with Riverside County staff supported a **bus shelter** to be provided. This supports pedestrian and transit connectivity in the Meadowbrook community; tentatively along Bus Route 9, along Highway 74.
HC 16.14 – Sensitive Receptors, Pesticides and Fertilizers. *Assure that sensitive receptors are separated and protected from polluting point sources, as feasible, including agricultural businesses that produce or use pesticides and chemical fertilizers.*	☐	☐	☒	Policy not applicable. This use is not agriculture related. The cemetery will have limited grass areas. Aesthetic landscaping will be on the property.

	Mitigation Measure or Condition of Approval	Project Design Feature	Policy Not Applicable	Notes (250-word max per response)
HC 16.15* – Site Design and *Industrial and Warehousing. *Assure that site plan design protects people and land, particularly sensitive land uses such as housing and schools, from air pollution and other externalities associated with industrial and warehouse development through the use of barriers, distance, or similar solutions or measures from emission sources when possible.*	☐	☐	☒	Policy not applicable. This is not industrial and warehousing uses.
HC 16.16 – Landscaping, Particulate Matter, and Air Pollution. *Apply pollution control measures such as landscaping, vegetation, and green zones (in cooperation with the SCAQMD) and other materials, which trap particulate matter or control air pollution.*	☐	☒	☐	This project is subject to normal development conditions subject to SCAQMD requirements for grading and construction. Proposed use is cemetery, chapel, mortuary, and caretaker residence. Landscape plan provided as part of submittal package. Project is subject to grading permit approval.
HC 16.18 – Job Creation and Reduction of Vehicle Miles. *Promote new development that emphasizes job creation and reduction in vehicle miles traveled in job-poor areas and does not otherwise contribute to onsite emissions to improve air quality.*	☐	☒	☐	Policy not applicable. This is not a job center. There may be up to 5 employees on site at any one time. Employees are to serve the cemetery grounds, the mortuary, and daily maintenance and security. As being good neighbors to the community, the applicant is contributing to the public mass transit system by providing a proposed bus shelter within the Meadowbrook community. Discussion with Riverside County staff supported a **bus shelter** to be provided. This supports pedestrian and transit connectivity in the Meadowbrook Community; tentatively along Bus Route 9, along Highway 74.
HC 16.22 – Industr*ial *Water Use Discharges and Agriculture and Pesticide/ Chemical Use. *Discourage industrial uses which use large quantities of water in manufacturing or cooling processes that result in subsequent effluent discharges and encourage agricultural businesses to limit and reduce the production and use of pesticides and chemical fertilizers to the maximum extent possible thereby minimizing contaminated infiltration and runoff, including runoff to the Salton Sea and other standing bodies of water.*	☐	☐	☒	Policy not applicable. This is not industrial, warehouse, or agriculture use.

	Mitigation Measure or Condition of Approval	Project Design Feature	Policy Not Applicable	Notes (250-word max per response)
HC 16.23 – Industrial and Agriculture Uses and Toxic Contamination. *Discourage industrial and agricultural uses which produce significant quantities of toxic emissions into the air, soil, and groundwater to prevent the contamination of these physical environments.*	☐	☐	☒	Policy not applicable. This is not industrial, warehouse, or agriculture use.
HC 16.24 – Compatibility Criteria for Industrial, Agricultural, And Adjacent Land Uses. *Ensure compatibility between industrial development and agricultural uses and adjacent land uses. To achieve compatibility, industrial development and agricultural uses will be required to include criteria addressing noise, land, traffic, and greenhouse gas emissions to avoid or minimize creating adverse conditions for adjacent communities.*	☐	☐	☒	Policy not applicable. This is not industrial, warehouse, or agriculture use.
HC 16.25 – Mining Projects and Compatibility. *Require the conversion of mining operations into uses that are compatible with surrounding areas in accordance with the Surface Mining and Reclamation Act.*	☐	☐	☒	Policy not applicable. This is not a mining, industrial, warehouse, or agriculture use. Proposed use is cemetery, chapel, mortuary, and caretaker residence.

Food Access

	Mitigation Measure or Condition of Approval	Project Design Feature	Policy Not Applicable	Notes (250-word max per response)
HC 17.2 – Building Setback and Activation of Sidewalks. *Orient buildings closer to streets or provide landscaped promenades that connect buildings to bus stops with routes that provide access to shopping centers, grocery stores, and areas where farmer's markets are held.*	☐	☒	☐	Proposed use is cemetery, chapel, mortuary, and caretaker residence. Sidewalks will be constructed for Garfield Road proposed cul de sac as necessary, and will have sidewalks, walking paths, and trails where appropriate on cemetery grounds. As a good neighbor, the applicant is contributing to the public mass transit system by providing a proposed bus shelter within the Meadowbrook community. Discussion with County planning staff encouraged a **bus shelter** to be provided. This supports the community by providing pedestrian and transit connectivity along Bus Route 9, on Highway 74.
***HC 17.3* – Site Design and Interior Spaces.** *Encourage site design for new development to accommodate interior spaces for recreational and other neighborhood uses, such as community gardens and farmer's markets in order to increase access to fresh and healthy foods; and to render such spaces convenient and available to neighboring streets, neighborhoods, and other nearby facilities to fill the void or lack of small grocery stores and increase access to fresh and healthy foods within EJ Communities.*	☐	☐	☒	Policy not applicable this is not a recreation use or community garden or a farm. The cemetery will be landscaped to provide a place for mourning, worship, prayer, meditation, and relaxation.
***HC 17.5* – Diverse Food Establishments.** *Encourage the development of diverse food establishments prioritizing mom and pop healthy food establishments and community kitchens for homemade foods to be sold in areas with a high concentration of fast-food establishments, convenience stores, and liquor stores.*	☐	☐	☒	Policy not applicable. This is not a food establishment.
***HC 17.6* – Affordable Access to Fruits and Vegetables.** *Work with local farmers and growers to develop a program to provide affordable access to fruits and vegetables grown in the area to the EJ communities. Identify and establish the location of grocery stores, healthy corner stores, farmer's markets all of which carry a complement of*	☐	☒	☐	Policy not applicable. This is not a food establishment. However, a public bus shelter may support general public access to food (grocery) center destinations.

healthy foods to be located in close proximity to transit nodes and other active transportation system links.				The applicant is contributing to the public mass transit system by providing a proposed bus shelter within the Meadowbrook community. Discussion with County staff encouraged a **bus shelter** to be provided. This will support the community by providing pedestrian and transit connectivity along Bus Route 9, on Highway 74.
***HC 17.7* – Edible Landscaping and Community Gardens.** *Promote edible landscaping and community gardens for suitable public and private land as well as for residential and mixed-use projects.*	☐	☐	☒	Policy not applicable this is not a recreation use or community garden or a farm. The cemetery will be landscaped to provide a place for mourning, worship, prayer, meditation, and relaxation.

Safe and Sanitary Homes

	Mitigation Measure or Condition of Approval	Project Design Feature	Policy Not Applicable	Notes (250-word max per response)
HC 18.7* – Polluting Uses *and Noticing Requirements. *Discourage industrial, agricultural, and other land uses that may pollute and cause health conflicts with residential land uses either directly or indirectly. Ensure that community members are properly notified and involved in the decision-making process for new land-use proposals.*	☐	☐	☒	Policy not applicable. This is not industrial, warehouse, or agriculture use. Proposed use is cemetery, chapel, mortuary, and caretaker residence. Project is a CUP and complies with county codes.
***HC 18.8* – Design to Limit Exposure of Residential Development.** *Work with the development community including small property and mobile home park owners so new residential development, particularly for low-income households, is designed to limit their exposure to high noise levels, pesticide and fertilizer exposure, dust pollution, and other potential impacts associated with adjacent industrial and agricultural uses.*	☐	☐	☒	Policy not applicable. This is not industrial, warehouse, or agriculture use. Proposed use is cemetery, chapel, mortuary, and caretaker residence. Standard grading and construction practices for grading permit and building permit are applied subject to SCAQMD permit process for earthwork.
HC 18.9* – Design *and Character of the Surrounding Area. *Encourage the location and design of new developments to visually enhance and not degrade the character of the surrounding area through consideration of the following concepts.*	☐	☒	☐	Proposed use is cemetery, chapel, mortuary, and caretaker residence. CUP process requires design review. County PAR and DAC meetings

	Mitigation Measure or Condition of Approval	Project Design Feature	Policy Not Applicable	Notes (250-word max per response)
				occurred. Undeveloped land becomes landscaped cemetery. Property becomes secured and local nuisances and squatting is removed.
a. Use of Design Standards. *Using design standards of the appropriate Area Plan land use category.*	☐	☒	☐	Proposed use is cemetery, chapel, mortuary, and caretaker residence. Zoning allows Cemetery Use. CUP process requires design review. County PAR and DAC meetings occurred. Site plan provided. New architecture styles are added to the community. Refer to illustrations provided.
b. Codes and Regulations. *Construction of structures in accordance with the requirements of Riverside County's zoning, building, and other pertinent codes and regulations.*	☐	☒	☐	Proposed use is cemetery, chapel, mortuary, and caretaker residence. CUP process requires design review. County PAR and DAC meetings occurred. Site plan provided. Project following codes and regulations per County DAC meeting and municipal code.
c. Landscaping Plan. *Require that an appropriate landscape plan be submitted and implemented for development projects subject to discretionary review.*	☐	☒	☐	Proposed use is cemetery, chapel, mortuary, and caretaker residence. CUP process requires design review. County PAR and DAC meetings occurred. Conceptual landscape plan provided. Following CUP process.
d. Drought Resistant Landscaping. *Use of drought-tolerant landscaping that incorporates adequate drought-conscious irrigation systems.*	☐	☒	☐	Proposed use is cemetery, chapel, mortuary, and caretaker residence. CUP process requires design review. County PAR and DAC meetings occurred. Site plan provided. Landscape plan part of CUP process.
e. Energy Efficiency in Design. *Application of energy efficiency through street configuration, building orientation, and landscaping to capitalize on shading and facilitate solar energy.*	☐	☒	☐	Proposed use is cemetery, chapel, mortuary, and caretaker residence. CUP process requires design review. County PAR and DAC meetings occurred. Site plan provided. Landscape plan is part of CUP process. Buildings follow Building Code requirements for energy efficiency
f. Water Conservation. *Application of water conservation techniques, such as groundwater recharge basins, use of porous pavement, drought-tolerant landscaping, and water recycling, as appropriate.*	☐	☒	☐	Proposed use is cemetery, chapel, mortuary, and caretaker residence. CUP process requires design review. A Water Quality Management

	Mitigation Measure or Condition of Approval	Project Design Feature	Policy Not Applicable	Notes (250-word max per response)
				Plan (WQMP) or similar is required. PAR and DAC meetings occurred. Site plan provided. Landscape plan is part of CUP process. Irrigation plans are part of design package during improvement plan process. Plant palette provided as part of the CUP package is suited for this neighborhood and environment.
g. Innovative Design. *Encourage innovative and creative design concepts.*	☐	☒	☐	Proposed use is cemetery, chapel, mortuary, and caretaker residence. CUP process requires design review. PAR and DAC meetings occurred. Site plan provided. Design solutions for quasi-public use chapel, mortuary and cemetery are designed for setting tone for meditation and soothing individuals.
h. Public Art. *Encourage the provision of public art that enhances the community's identity, which may include elements of historical significance and creative use of children's art.*	☐	☒	☐	The applicant is contributing to the public mass transit system by providing a proposed bus shelter within the Meadowbrook community. Discussion with County staff encouraged a **bus shelter** to be provided. This will support the community by providing pedestrian and transit connectivity along Bus Route 9. Bus shelter may have opportunity to provide displays for either advertising or public art. Proposed use is cemetery, chapel, mortuary, and caretaker residence. CUP process requires design review. PAR and DAC meetings occurred. Architectural design of chapel and mortuary is part of CUP process and contributes to community. Street frontage of proposed cul de sac will be improved. Walls, landscaping and building architecture will contribute towards on site amenities based on design themes.

	Mitigation Measure or Condition of Approval	Project Design Feature	Policy Not Applicable	Notes (250-word max per response)
i. Signage. *Include consistent and well-designed signage that is integrated with the building's architectural character.*	☐	☒	☐	Proposed use is cemetery, chapel, mortuary, and caretaker residence. Limited signage will be provided per sign code. Architectural design of chapel and mortuary is part of CUP process and contributes to community.
j. Vehicular Access. *Provide safe and convenient vehicular access and reciprocal access between adjacent commercial uses.*	☐	☒	☐	Policy not applicable. Not a commercial use. There are no commercial uses nearby. The applicant is contributing to the public mass transit system by providing a proposed bus shelter within the Meadowbrook community. Discussion with County staff encouraged a **bus shelter** to be provided. This will support the community by providing pedestrian and transit connectivity along Bus Route 9.
k. Service Areas and Residential. *Locate site entries and storage bays to minimize conflicts with adjacent residential neighborhoods.*	☐	☐	☒	Policy not applicable. Not a commercial use. Driveways and access points are provided on site plan. Garfield Road is the main entry into the cemetery. There is a private driveway that provides a connection to the chapel for loading and unloading during funeral services.
l. Mitigation. *Mitigate noise, odor, lighting, pollution exposure, and other impacts on surrounding properties.*	☐	☒	☐	Proposed use is cemetery, chapel, mortuary, and caretaker residence. Not a commercial use. Any future mitigations identified during CUP process will be implemented. A lighting photometric study is provided in the CUP package. Operational hours of the cemetery is from dawn to dusk. Refer to operations plan.
***m. Landscaping* in Open Spaces and Parking Lots**. *Provide and maintain landscaping in open spaces and parking lots.*	☐	☒	☐	Proposed use is cemetery, chapel, mortuary, and caretaker residence. CUP process requires design review. PAR and DAC meetings occurred. Parking lot landscaping provided as shown on site plan. 37.5 acres of natural open space provided. Maintained by MMCC. 1.5 acres of landscaping is around the parking lots,

	Mitigation Measure or Condition of Approval	Project Design Feature	Policy Not Applicable	Notes (250-word max per response)
				chapel, mortuary, caretakers residence. This will be maintained and irrigated.
n. Drought Tolerant Landscaping. *As feasible, maximize landscape coverage with an emphasis on drought-tolerant landscaping.*	☐	☒	☐	Proposed use is cemetery, chapel, mortuary, and caretaker residence. CUP process requires design review. PAR and DAC meetings occurred. Landscape plans/design for chapel and mortuary is part of CUP process. Landscape plant palette provided.
o. Preservation of Natural Features. *Preserve, as feasible, natural features, such as unique natural terrain, arroyos, canyons, and other drainage ways, and native vegetation, wherever possible, particularly where they provide continuity with more extensive regional systems.*	☐	☒	☐	Proposed use is cemetery, chapel, mortuary, and caretaker residence. Site plan provided. 37.5 acres of 73.2 acres is natural terrain protected in specific areas of the property for jurisdictional water areas, hillside slopes, and other boulder features. Protection of approximately 3,234 lineal feet of seasonal stream areas (Jurisdictional Waters). CUP process requires design review. PAR and DAC meetings occurred.
p. Pedestrian Activity. *Require, as feasible, that new development be designed to provide adequate space for pedestrian connectivity and access, recreational trails, vehicular access, and parking, supporting functions, open space, and other pertinent elements.*	☐	☒	☐	The applicant is contributing to the public mass transit system by providing a proposed bus shelter within the Meadowbrook community. Discussion with County staff encouraged a **bus shelter** to be provided. This will support the community by providing pedestrian and transit connectivity along Bus Route 9. Proposed use is cemetery, chapel, mortuary, and caretaker residence. This is a place of mourning, worship, and meditation. 37.5 acres of natural open space provided. Maintained by MMCC. This is not a park site or a staging area for regional trail connection. CUP process requires design review. PAR and DAC meetings occurred. Regional trail connections are

	Mitigation Measure or Condition of Approval	Project Design Feature	Policy Not Applicable	Notes (250-word max per response)
				provided along east property line. These are controlled by gates on the private property. These are connectors to the offsite trail. There is approximately 1,780 Lineal Feet of new trail within Cemetery. Internal trail systems (walking paths) for cemetery use are provided. A couple points of connection occur along east property line that connect to the regional trail if patrons want to walk along the regional trail. Proposed cul de sac on Garfield will have sidewalks.
q. Integration of Parking Lots. *Design parking lots and structures to be functionally and visually integrated and connected.*	☐	☒	☐	Proposed use is cemetery, chapel, mortuary, and caretaker residence. CUP process requires design review. PAR and DAC meetings occurred. Site plan provided. Parking is provided and interconnected between uses. Parking is consolidated between Chapel, Mortuary and Caretakers residence. 139 parking spaces are required per parking code. 152 parking stalls are provided. Cemetery areas will have on street parking along shoulders and small parking areas for convenience.
r. Building Access Points. *As feasible, site building access points along sidewalks, pedestrian areas, and bicycle routes, and include amenities that encourage pedestrian activity where such passthrough areas include wayfinding signage, street trees, grade and lateral separation from roads, all with consideration given to adequate safety lighting, and landscape screening.*	☐	☒	☐	The applicant is contributing to the public mass transit system by providing a proposed bus shelter within the Meadowbrook community. Discussion with County planning staff encouraged a **bus shelter** to be provided. This will support the community by providing pedestrian and transit connectivity along Bus Route 9, Highway 74. Sidewalk around cul de sac is provided to loop pedestrian path on Garfield Road. Interior site

	Mitigation Measure or Condition of Approval	Project Design Feature	Policy Not Applicable	Notes (250-word max per response)
				pathways and sidewalks are provided around gravesites, chapel, and mortuary. Proposed use is cemetery, chapel, mortuary, and caretaker residence. Parking lot is provided for convenient access to buildings. CUP process requires design review. PAR and DAC meetings occurred. Site plan provided.
s. Pedestrian Crossings. *Encourage safe and frequent pedestrian crossings and ensure that sidewalks and other pedestrian walkways provide continuity between land uses essential to a functional lifestyle, and as needed such sidewalks and pedestrian walkways should provide sufficient lighting and signage to ensure public safety.*	☐	☒	☐	The applicant is contributing to the public mass transit system by providing a proposed bus shelter within the Meadowbrook community. Discussion with County staff encouraged a **bus shelter** to be provided. This will support the community by providing pedestrian and transit connectivity along Bus Route 9, Highway 74. Sidewalks are provided to connect uses and the community. The cul de sac bulb will have a sidewalk. Access into cemetery will have sidewalk. Chapel, Mortuary, parking and caretaker residence will have sidewalks interconnected. Cemetery will have pathways from private roads throughout gravesites for walking.
t. Human Scale. *Encourage the creation of a human-scale ground floor environment that includes public open areas that separate pedestrian space from auto traffic or where mixed, it does so with special regard to pedestrian safety.*	☐	☒	☐	The applicant is contributing to the public mass transit system by providing a proposed bus shelter within the Meadowbrook community. Discussion with County staff encouraged a **bus shelter** to be provided. This will support the community by providing pedestrian and transit connectivity along Bus Route 9, Highway 74. The chapel and mortuary are designed to be at a respective human scale for visitors to not feel overwhelmed. The front entry to the

	Mitigation Measure or Condition of Approval	Project Design Feature	Policy Not Applicable	Notes (250-word max per response)
				cemetery is designed for security purposes and considers the human element providing a softer appearance that transitions between the residential area to the west and the cemetery entry in the new cul de sac of Garfield Road. CUP process requires design review. PAR and DAC meetings occurred. Site plan provided. Architectural design and landscape design focuses on human-scale elements.
u. Recognition of Open Space. *Recognize open space, including hillsides, arroyos, riparian areas, and other natural features as amenities that add community identity, beauty, recreational opportunities, and monetary value to adjacent developed areas.*	☐	☒	☐	Open space is provided as a main design feature. Open space is provided throughout cemetery. Refer to site plan. CUP process requires design review. PAR and DAC meetings occurred. 37.5 acres of natural open space is provided. Grave sites are on approximately 24.9 acres. Slopes between grave site areas are covering approximately 9.2 acres and these will be landscaped. Landscape areas around the chapel and mortuary includes 1.5 acres in area.
v. Fire Hazards. *Manage wildland fire hazards in the design of development proposals located adjacent to natural open space.*	☐	☒	☐	Proposed use is cemetery, chapel, mortuary, and caretaker residence. Site plan provided. Project improves the property from undeveloped to developed, removing fire hazards. Property will have irrigation and fire hydrant access where before it did not have. Water is extended from Garfield Road into cemetery site. Fire department has access into cemetery where before terrain may not have been accessible for fire trucks. Continued water line extension into the cemetery approximately 1,600 lineal feet to provide fire hydrants and irrigation for new landscape along proposed “A” Street.

	Mitigation Measure or Condition of Approval	Project Design Feature	Policy Not Applicable	Notes (250-word max per response)
				Road dedication for possible public road connection between Theda Street and Dowling Road. Approximately 5.9 acres of land assigned as a 100' right of way easement. A fire master plan and fuel modification plan are requirements as part of the CUP and conditions.
***HC 18.12 – Safe Affordable Housing* and Displacement.** *Prioritize the development of safe and affordable housing in EJ Communities while at the same time minimizing the displacement of existing residents consistent with Housing Element, Goal 2, Action 2.1h and as may be amended by the 6th Cycle Housing Element. Affordable housing projects should include various housing types that respond to community priorities and input.*	☐	☐	☒	Policy not applicable. Project is not a residential development. One caretaker residence provided for on site property manager.

Safe and Sanitary Homes

	Mitigation Measure or Condition of Approval	Compatible through Project Design Feature	Policy Not Applicable	Notes (250-word max per response)
HC 19.2 – Outdoor Recreation. *Develop of high-quality parks, green space, hiking trails, recreational facilities and natural environments in areas where such facilities are lacking.*	☐	☐	☒	This is a cemetery not a recreational use. Site plan provided. Approximately 1,780 lineal feet of regional trail extension along east side of property. Natural terrain is protected in specific areas of the property. Regional trail connections are provided to regional trail along east property line. The cemetery access is gated and secured but open during operational hours from dawn to dusk. If visitors of the cemetery wish to access the off site regional trail, they would be able to through provided man gates.
HC 19.6 – Local Trails. *Plan for a system of local trails that enhances recreational opportunities and connects with regional trails.*	☐	☒	☐	Regional trail connections are provided to regional trail along east property line. Approximately 1,780 lineal feet of regional trail extension along east side of property.

HC 19.7 – Incorporate Recreation Opportunities. *Incorporate open space, community greenbelt separators, and recreational amenities into development areas in order to enhance recreational opportunities and community aesthetics to improve the quality of life.*	☐	☐	☒	Policy not applicable. Proposed use is cemetery, chapel, mortuary, and caretaker residence. 37.5 acres of natural open space provided. Maintained by MMCC. Cemetery trails provided for cemetery visitors. Regional trail connections provided at east property line for visitors to access regional trail. Approximately 1,780 lineal feet of regional trail extension along east side of property

Public Facilities

	Mitigation Measure or Condition of Approval	Project Design Feature	Policy Not Applicable	Notes (250-word max per response)
HC 20.1 – Public Facilities and Supporting Infrastructure. *New development should provide for public services including but not limited to solar street lighting, shading structures at bus stops, other supporting infrastructure, and extension of trash and recyclables pickup routes.*	☐	☒	☐	The applicant is contributing to the public mass transit system by providing a proposed bus shelter within the Meadowbrook community. Discussion with County planning staff encouraged a **bus shelter** to be provided. This will support the community by providing pedestrian and transit connectivity along Bus Route 9, Highway 74. Proposed use is cemetery, chapel, mortuary, and caretaker residence. Infrastructure supporting the cemetery will be put in place. Garfield Road will become a cul de sac. CUP process requires design review. PAR and DAC meetings occurred. Roads and infrastructure will be built to support cemetery. Approximately 2,330 lineal feet of a new water line from a nearby intersection of Read Street and Wallace Ave to the proposed Garfield Road cul-de-sac. Road dedication for possible public road connection between Theda Street and Dowling Road. Approximately 5.9 acres of land assigned as a 100' right of way easement.

	Mitigation Measure or Condition of Approval	Project Design Feature	Policy Not Applicable	Notes (250-word max per response)
HC 20.2 – Development and Internal Pedestrian Circulation. *New development should promote convenient internal pedestrian circulation among land uses (existing and proposed) within each neighborhood and connecting with existing adjacent developed areas and as applicable consistent with the Southern California Association of Governments Regional Transportation Plan/Sustainable Communities Strategy, and amendments thereto.*	☐	☒	☐	The applicant is contributing to the public mass transit system by providing a proposed bus shelter within the Meadowbrook community. Discussion with County staff encouraged a **bus shelter** to be provided. This will support the community by providing pedestrian and transit connectivity along Bus Route 9, Highway 74. Proposed use is cemetery, chapel, mortuary, and caretaker residence. CUP process requires design review. PAR and DAC meetings occurred. Site plan provided. Pedestrian improvements are made for Garfield Road and internal to the site. Abutting property owners are provided access easements to Garfield Road. Road dedication for possible public road connection between Theda Street and Dowling Road. Approximately 5.9 acres of land assigned as a 100' right of way easement.
HC 20.4 - *New development and conservation land uses should not infringe upon existing essential public facilities and public utility corridors, which include county regional landfills, fee-owned rights-of-way, and permanent easements, whose true land use is that of public facilities.*	☐	☒	☐	Proposed use is near electric utility transmission lines but are not impacting existing easements. CUP process requires design review. PAR and DAC meetings occurred.

30 YEARS

TOLAR
MANUFACTURING
Connecting Communities

Proudly connecting communities since 1991, designing and fabricating the broadest portfolio of transit shelters in North America.



BRT Stations

Sleek lines. Stylishly modern. Durable strength.

Los Angeles, California

Seattle, Washington

Santa Clara, California



Riverside, California

Nashville, Tennessee

Cincinnati, Ohio

Stockton, California



Livermore, California

Boston, Massachusetts

Photo courtesy of: Massachusetts Bay Transportation Authority

Jacksonville, Florida

Jacksonville, Florida

Monterey, California

Escondido, California

THE TOLAR DIFFERENCE

Creating bus shelters and other outdoor structures of durability and distinction that reflect the character of your community

. . . That's the Tolar Difference.

How can we help you make a difference in your community?

30 YEARS

TOLAR
MANUFACTURING
Connecting Communities

30 YEARS

TOLAR
MANUFACTURING
Connecting Communities

Contact Us

951.808.0081 Info@TolarMfg.com